DELHI MRTS PROJECT PHASE III LINE 7

TRAIN CONTROL & SIGNALLING SYSTEM CONTRACT CS03

TRACK AND SIGNALLING PLAN LINE 7
GOKULPURI TO SHIV VIHAR STATION
SECTION - MJSV

DELHI METRO RAIL CORPORATION LTD.
Metro Bhawan, Fire Brigade Lane, Barakhamba Road, New Delhi-110001

ORIGINATOR:
BOMBARDIER
the evolution of mobility

© 2021, Bombardier Inc.
All rights reserved.

AS-BUILT DRAWING

REV	DATE	DESCRIPTION
9.0	04-OCT-21	AS-BUILT DRAWING

	NAME	DATE
DESIGNED	SAMIKSHA S.	27-SEP-21
CHECKED	ASHOK K.	04-OCT-21
APPROVED	ROHIT T.	04-OCT-21

DRAWING TITLE: DELHI MRTS PROJECT PHASE III LINE 7
TRAIN CONTROL & SIGNALLING SYSTEM CONTRACT CS03
TRACK AND SIGNALLING PLAN LINE 7
GOKULPURI TO SHIV VIHAR STATION
SECTION - MJSV

DRAWING No:	COST CENTRE:	SCALE	SHEET	CONT.	REV.
100241843	A PRELIMINARIES AND GENERAL REQUIREMENTS	N/S	1	2	9.0

REV.	REVISION INFORMATION	DESIGNED	CHECKED	DATE
9.0	AS-BUILT RELEASED	SAMIKSHA S.	ASHOK K.	04-OCT-21
8.1	UPDATED AS PER CUSTOMER COMMENT LETTER REFERENCE NO. :- DMRC.S$T.CSO3.PH_III.61K.II.2611	SAMIKSHA S.	ASHOK K.	29-SEP-21
	-ADDED TABLE FOR MAP SPEED AS PER SEGMENT LAYOUT AT LONG SHEET (1 OF 1)			
8.0	RELEASED	IRSHAD A.	ASHOK K.	05-JUL-19
7.4	UPDATED AS PER REVIEWER'S COMMENTS MOR DATED:- 05-JUL-19	IRSHAD A.	ASHOK K.	05-JUL-19
	-ADDED MISSING CCTV05044	IRSHAD A.	ASHOK K.	04-JUL-19
7.3	ADDED WNRA & CCTV DETAILS AS PER RF SCHEMATIC DRAWING REGION-5 VERSION-4.0	IRSHAD A.	ASHOK K.	04-JUL-19
7.2	- UPDATED AS PER THE REVIEWER'S COMMENTS BASED ON MoR DATED 08-JAN-19	KULDEEP M.	ASHOK K.	24-JAN-19
	- UPDATED REAR CROSSOVER TRACK LENGTHS FOR SHIV VIHAR STATION			
7.1	-UPDATED FOLLOWING AS PER THE NCR bkk_067#2027	KULDEEP M.	ASHOK K.	19-DEC-18
	MARKED THE AX HEAD T05107/T05109 IN FOULING REGION.			
	- UPDATED FOLLOWING AS PER THE CBTC MAP SURVEY REPORT.			
	ADDED NORMING POINT DATA INTO THE SIGNALLING PLAN.			
	UPDATED CHAINAGES OF SIGNALS, AX HEADS, PLATFORM CENTER AND TRACK SECTIONS LENGTHS.			
	UPDATED THE FOULING MARK CHAINAGES AS PER THE TRACK AS BUILT.			
	UPDATED THE PSEUDO PLATFORM CHAINAGES.			

REVISION INFORMATION

DELHI METRO RAIL CORPORATION LTD.
Metro Bhawan, Fire Brigade Lane, Barakhamba Road, New Delhi-110001

ORIGINATOR:
BOMBARDIER
the evolution of mobility

© 2021, Bombardier Inc.
All rights reserved.

AS-BUILT DRAWING

REV	DATE	DESCRIPTION
9.0	04-OCT-21	AS-BUILT DRAWING

	NAME	DATE
DESIGNED	SAMIKSHA S.	27-SEP-21
CHECKED	ASHOK K.	04-OCT-21
APPROVED	ROHIT T.	04-OCT-21

DRAWING TITLE: DELHI MRTS PROJECT PHASE III LINE 7
TRAIN CONTROL & SIGNALLING SYSTEM CONTRACT CS03
TRACK AND SIGNALLING PLAN LINE 7
GOKULPURI TO SHIV VIHAR STATION
SECTION - MJSV

DRAWING No:	COST CENTRE:	SCALE	SHEET	CONT.	REV.
100241843	A PRELIMINARIES AND GENERAL REQUIREMENTS	N/S	2	3	9.0

7.0	RELEASED	KULDEEP M.	JAYA S.	18-JUL-18
6.2	UPDATED AS PER REVIEWER'S COMMENTS BASED ON MoR DATED 17-JUL-18	KULDEEP M.	JAYA S.	17-JUL-18
6.1	AS PER NCR bkk_067#1828 :-	KULDEEP M.	JAYA S.	12-JUL-18
	- UPDATED THE SPEED, GRADE AND CURVE PROFILES FOR MAINLINE GKPR TO SVVR AS PER TRACK AS-BUILT			
	RECEIVED ON 11-JUL-18 (REFER SHEET 3, S.NO. 5)			
	- ADDED THE SPEED , GRADE & CURVE PROFILES IN SHIV VIHAR CROSS-OVER.			
6.0	RELEASED	KULDEEP M.	ASHOK K .	26-MAR-18
5.1	UPDATED AS PER CUSTOMER REQUIREMENT AND NCR bkk_067#1488.	KULDEEP M.	ASHOK K .	26-MAR-18
	ALL CHANGES ARE IN RED COLOUR.			
	ADDED A VIRTUAL SIGNAL VS05366 ON TRACK T05098 IN UP DIRECTION AT SHIV VIHAR STATION			
5.0	RELEASED	JAYA S.	VARUN C.	07-FEB-17
4.2	(ALL CHANGES ARE MARKED IN RED CLOUD IN DIFFERENT LAYER)	JAYA S.	VARUN C.	12-JAN-17
	-SPEED AT TURNOUTS PROVIDED ON SHEET 10			
	-PSUEDO PLATFORM ADDED AS PER BT-DMRC BANGKOK FAT VISIT MoM(12TH TO 16TH DEC 2016) AT			
	T05106 AND T05111			
	-ADDED 95KMPH SPEED AT STRAIGHT LINES			
4.1	-UPDATED AS PER CUSTOMER COMMENTS	DHANANJAY S	JAYA S.	06-OCT-16
4.0	-RELEASED	JAYA S.	YOGESH D.	29-MAR-16
3.2	-UPDATED CURVE & GRADIENT PROFILE FOR UP & DOWN LINE	JAYA S.	YOGESH D.	21-MAR-16
	-UPDATED ALL CHAINAGES AS PER GENERAL ALIGNMENT PLAN H.NIZAMUDDIN TO SHIV VIHAR(DN & UP LINE) REV3.0			
	-UPDATED OBC BOUNDARY SYMBOL AT OBC BOUNDARY			
3.1	-UPDATED VIRTUAL SIGNAL NUMBER VS05359 TO VS05361	JAYA S.	VARUN C.	14-MAR-16
	-UPDATED VIRTUAL SIGNAL NUMBER VS05357 TO VS05359			
3.0	RELEASED	JAYA S.	VARUN C.	01-SEP-15
2.3	UPDATED AS PER REVIEWER'S COMMENTS:-	JAYA S.	VARUN C.	31-AUG-15
	A) UPDATED CHAINAGE OF T05109/T05111 AND S05234			
	B) REMOVED NOTES			
2.2	UPDATED CHAINAGE FOR S05204, S05247,S05202,S05231,S05234 AT SVVR	JAYA S.	VARUN C.	19-AUG-15
	UPDATED CHAINAGE FOR T05100/T05102, T05102/T05104, T05105/T05107,T05107/T05109,T05109/T05111 AT SVVR			
	UPDATED CHAINAGE FOR AX T05093/T05095 AT JOHRI ENCLAVE			
2.1	UPDATED VIRTUAL SIGNAL NUMBER OF JIEE ON UP LINE.	SANDEEP T.	VARUN C.	02-JUN-15
2.0	RELEASED	SANDEEP T.	VARUN C.	12-MAY-15
1.7	ADDED AXLE COUNTER HEAD AT SHIV VIHAR STATION	SANDEEP T.	VARUN C.	05-MAY-15
1.6	UPDATED AS PER REVIEWER'S COMMENT.	SANTOSH N.	VARUN C.	09-APR-15
1.5	UPDATED AS PER LATEST CIVIL ALIGNMENT FOR UP AND DN LINE.	SANTOSH N.	VARUN C.	01-APR-15
1.4	-UPDATED AS PER LATEST CIVIL GAD	SELVADASS D.	VARUN C.	27-JAN-15
1.3	-UPDATED AS PER MoR REV 1.1	SANDEEP T.	VARUN C.	03-DEC-14
1.2	-UPDATED AS PER EQUIPMENT NUMBERING SCHEME Rev8.0	SANDEEP T.	VARUN C.	24-NOV-14
1.1	UPDATED AS PER DMRC COMMENTS REF NO: DMRC/S&T/CS03/Ph-III/BT-SUB/II/482 DATED: 25TH JULY 2014.	SELVADASS D.	RAJNEESH M.	29-AUG-14
1.0	RELEASED	SELVADASS D.	VARUN C.	18-JUNE-14
0.2	UPDATED AS PER MOR DATED: 18-JUNE-14	SELVADASS D.	VARUN C.	18-JUNE-14
0.1	FIRST DRAFT	SELVADASS D.	VARUN C.	16-JUNE-14
REV.	REVISION INFORMATION	DESIGNED	CHECKED	DATE

REVISION INFORMATION

DELHI METRO RAIL CORPORATION LTD.
Metro Bhawan, Fire Brigade Lane, Barakhamba Road, New Delhi-110001

ORIGINATOR:
BOMBARDIER
the evolution of mobility

© 2021, Bombardier Inc.
All rights reserved.

AS-BUILT DRAWING

REV	DATE	DESCRIPTION
9.0	04-OCT-21	AS-BUILT DRAWING

	NAME	DATE
DESIGNED	SAMIKSHA S.	27-SEP-21
CHECKED	ASHOK K.	04-OCT-21
APPROVED	ROHIT T.	04-OCT-21

DRAWING TITLE: DELHI MRTS PROJECT PHASE III LINE 7
TRAIN CONTROL & SIGNALLING SYSTEM CONTRACT CS03
TRACK AND SIGNALLING PLAN LINE 7
GOKULPURI TO SHIV VIHAR STATION
SECTION - MJSV

DRAWING No:	COST CENTRE:	SCALE	SHEET	CONT.	REV.
100241843	A PRELIMINARIES AND GENERAL REQUIREMENTS	N/S	3	4	9.0

SHEET NO.	DOCUMENT NUMBER	REV.	LIST OF REFERENCE DOCUMENT
08	SEGMENT LAYOUT	18.0	FOR CHAINAGE , LENGTH, CIVIL SPEED LIMIT AND MAXIMUM ATP SPEED
07	100238976	4.0	RF SCHEMATIC REGION -5
06	100335379	6.0	CBTC DATA SUMMARY (SITE SURVEY REPORT) REGION-5
05	24-04-2018 AS-BUILTGAD LAJPAT NAGAR TO SHIV VIHAR.dwg	-	DETAILS OF PROFILES FROM GOKULPURI TO SHIV VIHAR (UP LINE-2 AND DOWN LINE-2) (RECEIVED 11-07-2018)
04	EMAIL FROM CUSTOMER WITH CONFIRMATION REGARDING THE ADDITION OF VIRTUAL SIGNALS AND THEIR LOCATIONS DATED 22-MARCH-18	-	-
03	DMRC/S&T/CS03/Ph-III/56-D/II/1206 DATED 19.5.2016		SPEED OF TRAINS IN LINE 7
02	H.Y./MP-SV/ELEV/GA/0001(SHEET 21 TO 25) H.NIZAMUDDIN TO SHIV VIHAR 14.01.16 .dwg(MODEL)	R3	GENERAL ALIGNMENT PLAN H. NIZAMUDDIN TO SHIV VIHAR (DN LINE)
01	H.Y./MP-SV/ELEV/GA/0001(SHEET 21 TO 25) H.NIZAMUDDIN TO SHIV VIHAR 14.01.16 .dwg	R3	GENERAL ALIGNMENT PLAN H. NIZAMUDDIN TO SHIV VIHAR (UP LINE)

REFERENCE DOCUMENT

DELHI METRO RAIL CORPORATION LTD.
Metro Bhawan, Fire Brigade Lane, Barakhamba Road, New Delhi-110001

ORIGINATOR:
BOMBARDIER
the evolution of mobility

© 2021, Bombardier Inc.
All rights reserved.

AS-BUILT DRAWING

REV	DATE	DESCRIPTION
9.0	04-OCT-21	AS-BUILT DRAWING

	NAME	DATE
DESIGNED	SAMIKSHA S.	27-SEP-21
CHECKED	ASHOK K.	04-OCT-21
APPROVED	ROHIT T.	04-OCT-21

DRAWING TITLE: DELHI MRTS PROJECT PHASE III LINE 7
TRAIN CONTROL & SIGNALLING SYSTEM CONTRACT CS03
TRACK AND SIGNALLING PLAN LINE 7
GOKULPURI TO SHIV VIHAR STATION
SECTION - MJSV

DRAWING No:	COST CENTRE:	SCALE	SHEET	CONT.	REV.
100241843	A PRELIMINARIES AND GENERAL REQUIREMENTS	N/S	4	5	9.0

SYMBOLS USED IN THE TRACK AND SIGNALLING PLAN

	SYMBOL	DESCRIPTION
1	SXXYYY M.D.S.T FOR ELEVATED SXXYYY SXXYYY M.D.S.T FOR UNDERGROUND (WALL MOUNT) SXXYYY	ROUTE INDICATOR — M FOR MAIN LINE GREEN ASPECT — D FOR FIRST DIVERSION VIOLET ASPECT — S FOR SECOND DIVERSION RED ASPECT — T FOR THIRD DIVERSION 3 – ASPECT SIGNAL "XX" = REGION NO. "YYY" = OBJECT NUMBERING (201–300)
2	SXXXXY SAABBB M.D.S.T	POINT PROTECTION SIGNAL "XXXX" = POINT NO. "Y" = DIRECTION OF TRAVEL "AA" = REGION NO. "BBB" = OBJECT NUMBERING (201–300)
3	SXXYYY	SHUNT SIGNAL "XX" = REGION NO. "YYY" = OBJECT NUMBERING (301–500)
4	SXXYYY	DEPENDENT SHUNT SIGNAL "XX" = REGION NO. "YYY" = OBJECT NUMBERING (301–500)
5	SXXYYY FOR ELEVATED/GROUND SXXYYY FOR UNDERGROUND (WALL MOUNT)	BUFFER STOP SIGNAL "XX" = REGION NO. "YYY" = OBJECT NUMBERING (301–350) FOR MAINLINE "YYY" = OBJECT NUMBERING (501–600) FOR DEPOT
6	VSXXYYY	VIRTUAL SIGNAL "XX" = REGION NO. "YYY" = OBJECT NUMBERING (351–400) FOR MAINLINE "YYY" = OBJECT NUMBERING (601–700) FOR DEPOT
7	PXXYY	POINT MACHINE "XX" = REGION NO. "YY" = OBJECT NUMBERING (01–99) = EEA–5 (MAIN LINE) = RDL2 (DEPOT)
8		FOULING POINT (POSITION SHALL BE CONFIRMED AT SITE)
9	X	ELECTRICAL KEY TRANSMITTER "X" = EKT GROUP NUMBER (I.E. EKT#1 FOR GROUP NO.1) NOTE: STARTING NUMBER "1" IN EVERY STATION
10	TXXYYY	AXLE COUNTER SECTION "XX" = REGION NO. "YYY" = OBJECT NUMBERING (001–200) FOR MAINLINE "YYY" = OBJECT NUMBERING (001–300) FOR DEPOT
11	TXXYYY / TXXYYY	AXLE COUNTER AXLE COUNTER LOCATED WITHIN FOULING AREA

	SYMBOL	DESCRIPTION
12		NEUTRAL SECTION
13		BUFFER STOP AND END OF TRACK
14	85 km/h CIVIL SPEED	FROM CIVIL ENGINEERING POINT OF VIEW THE LIMITATION SPEED IS 85 km/h
15	1.500% L=100m	GRADIENT 1.5 GRADIENT LENGTH IS 100 (m)
16	R= 400.000 m L= 800.000 m	CURVE RADIUS IS 400 m CURVE LENGTH IS 800 m
17	KM. 9+911	MILEAGE IS 9911 (m)
18	ITI & OCB	ITI : INTERLOCKING TO INTERLOCKING BORDER (REGION BORDER) & OBJECT CONTROLLER TO OBJECT CONTROLLER BOUNDARY
19	DOWN UP	NORMAL DIRECTION OF TRAFFIC
20		STATION WITH CBI AND OC
21		STATION WITH OC
22	ESPXXYYY	EMERGENCY STOP PLUNGER (ESP) "XX" = REGION NO. "YYY" = OBJECT NUMBERING (501–600) FOR MAINLINE "YYY" = OBJECT NUMBERING (701–750) FOR DEPOT
23	PLATFORM PFXXYYY	PLATFORM "XX" = REGION NO. "YYY" = OBJECT NUMBERING (601–650) FOR MAINLINE "YYY" = OBJECT NUMBERING (751–800) FOR DEPOT
24	PSEUDO PPXXYYY	PSEUDO PLATFORM "XX" = REGION NO. "YYY" = OBJECT NUMBERING (651–700) FOR MAINLINE "YYY" = OBJECT NUMBERING (801–850) FOR DEPOT

	SYMBOL	DESCRIPTION
25	NPXXYYY	NORMING POINT "XX" = REGION No. "YYY" = OBJECT NUMBERING (001–999)
26	WNRAXXYYY	PAIR OF WAYSIDE NETWORK RADIO ASSEMBLY (WNRA) "XX" = REGION NO. "YYY" = OBJECT NUMBERING (001–200) FOR MAINLINE "YYY" = OBJECT NUMBERING (701–900) FOR DEPOT
27	CCTVXXYYY	PAIR OF CLOSED CIRCUIT TELEVISION (CCTV) "XX" = REGION NO. "YYY" = OBJECT NUMBERING (001–200) FOR MAINLINE "YYY" = OBJECT NUMBERING (701–900) FOR DEPOT
28		SINGLE OF LINE–OF–SIGHT (LOS) ANTENNA
29		PAIR OF LINE–OF–SIGHT (LOS) ANTENNA
30		LEAKY FEEDER CABLE
31	AE	ATC ENDS MARKER BOARD
32	AB	ATC BEGINS MARKER BOARD
33	XC	NORMAL STOPPING MARKER BOARD XC = NUMBER OF CAR
34	SR XC FOR MAINLINE	SR = STOPPING REVERSE MARKER BOARD XC = NUMBER OF CAR
35	STOP	STOP BOARD
36		TRAP POINT
37	OCB	OCB : OBJECT CONTROLLER TO OBJECT CONTROLLER (BOUNDARY)
38	PSDXXYYY FOR MAINLINE PSDXXYYY FOR DEPOT	PLATFORM SCREEN DOOR "XX" = REGION NO. "YYY" = OBJECT NUMBERING (601–650) FOR MAINLINE "YYY" = OBJECT NUMBERING (801–850) FOR DEPOT

DELHI METRO RAIL CORPORATION LTD.
Metro Bhawan, Fire Brigade Lane, Barakhamba Road, New Delhi-110001

ORIGINATOR:
BOMBARDIER
the evolution of mobility

© 2021, Bombardier Inc.
All rights reserved.

AS-BUILT DRAWING

REV	DATE	DESCRIPTION
9.0	04–OCT–21	AS–BUILT DRAWING

	NAME	DATE
DESIGNED	SAMIKSHA S.	27–SEP–21
CHECKED	ASHOK K.	04–OCT–21
APPROVED	ROHIT T.	04–OCT–21

DRAWING TITLE: DELHI MRTS PROJECT PHASE III LINE 7
TRAIN CONTROL & SIGNALLING SYSTEM CONTRACT CS03
TRACK AND SIGNALLING PLAN LINE 7
GOKULPURI TO SHIV VIHAR STATION
SECTION - MJSV

DRAWING No:	COST CENTRE:	SCALE	SHEET	CONT.	REV.
100241843	A PRELIMINARIES AND GENERAL REQUIREMENTS	N/S	5	6	9.0

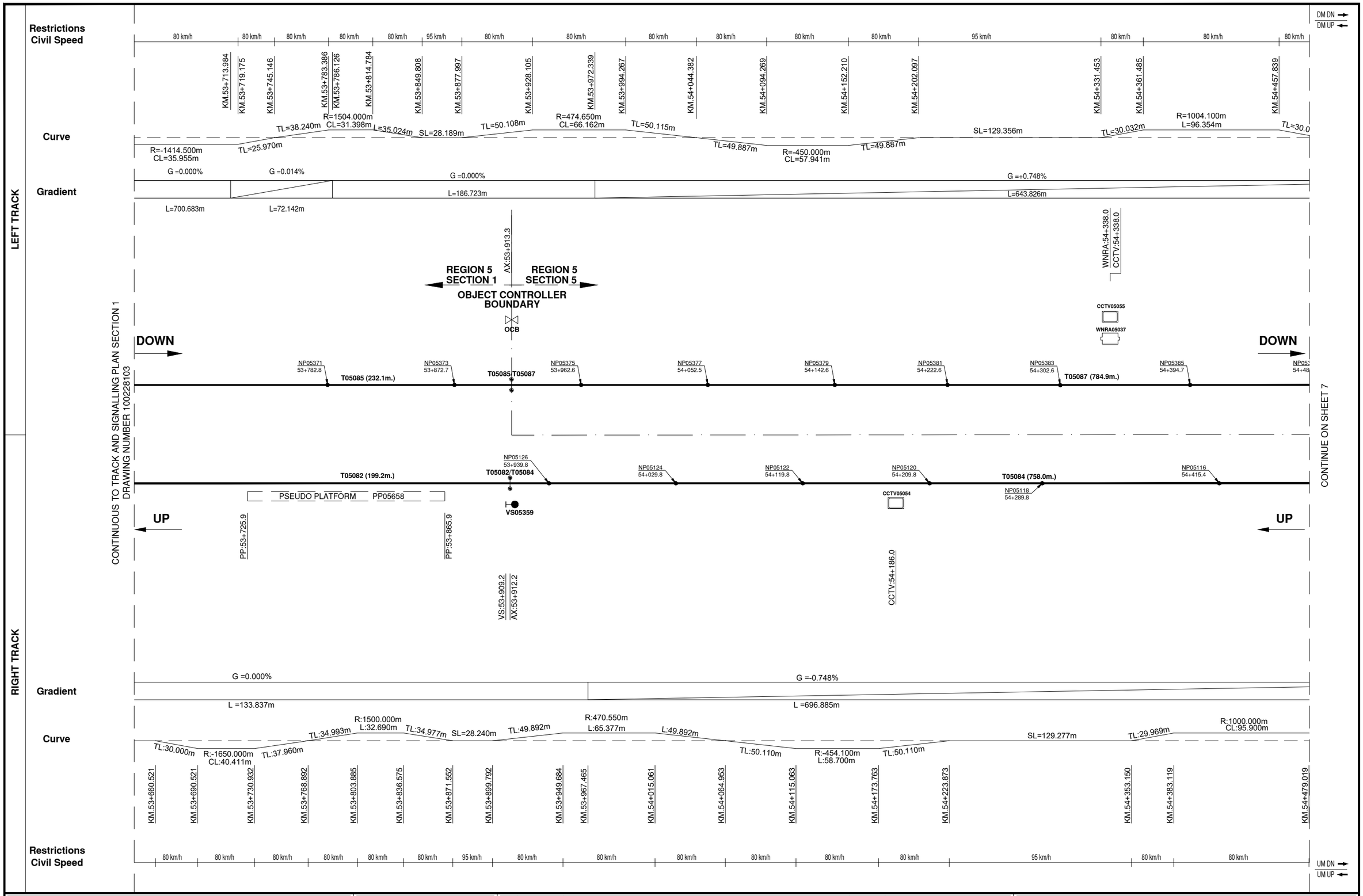

DELHI METRO RAIL CORPORATION LTD.
Metro Bhawan, Fire Brigade Lane, Barakhamba Road, New Delhi-110001

ORIGINATOR:
BOMBARDIER
the evolution of mobility

© 2021, Bombardier Inc. All rights reserved.

AS-BUILT DRAWING

REV	DATE	DESCRIPTION
9.0	04-OCT-21	AS-BUILT DRAWING

	NAME	DATE
DESIGNED	SAMIKSHA S.	27-SEP-21
CHECKED	ASHOK K.	04-OCT-21
APPROVED	ROHIT T.	04-OCT-21

DRAWING TITLE:
DELHI MRTS PROJECT PHASE III LINE 7
TRAIN CONTROL & SIGNALLING SYSTEM CONTRACT CS03
TRACK AND SIGNALLING PLAN LINE 7
GOKULPURI TO SHIV VIHAR STATION
SECTION - MJSV

DRAWING No:	COST CENTRE:	SCALE	SHEET	CONT.	REV.
100241843	A PRELIMINARIES AND GENERAL REQUIREMENTS	N/S	6	7	9.0

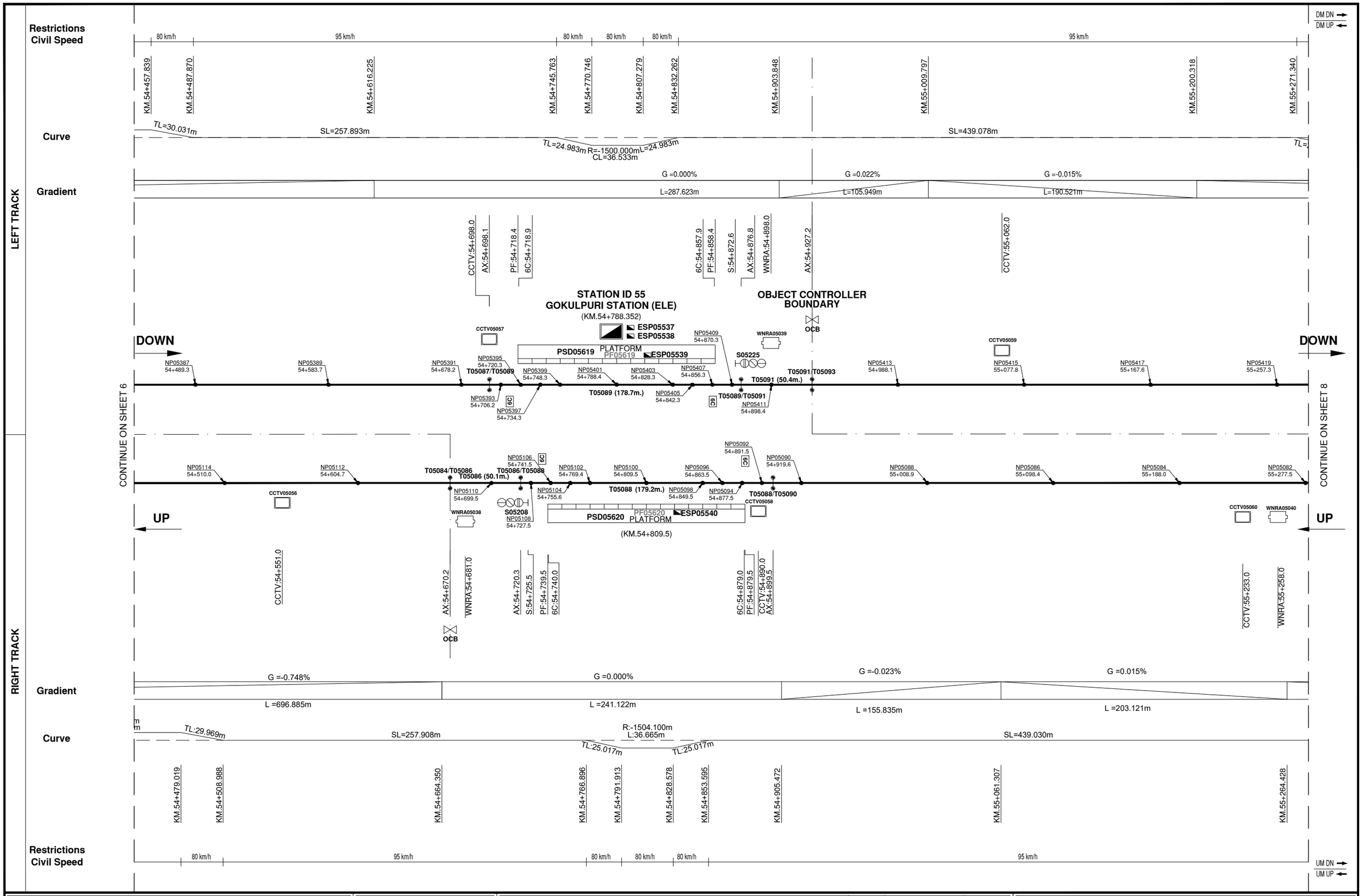

DELHI METRO RAIL CORPORATION LTD.
Metro Bhawan, Fire Brigade Lane, Barakhamba Road, New Delhi-110001

ORIGINATOR:
BOMBARDIER
the evolution of mobility

© 2021, Bombardier Inc.
All rights reserved.

AS-BUILT DRAWING

REV	DATE	DESCRIPTION
9.0	04-OCT-21	AS-BUILT DRAWING

	NAME	DATE
DESIGNED	SAMIKSHA S.	27-SEP-21
CHECKED	ASHOK K.	04-OCT-21
APPROVED	ROHIT T.	04-OCT-21

DRAWING TITLE:
DELHI MRTS PROJECT PHASE III LINE 7
TRAIN CONTROL & SIGNALLING SYSTEM CONTRACT CS03
TRACK AND SIGNALLING PLAN LINE 7
GOKULPURI TO SHIV VIHAR STATION
SECTION - MJSV

DRAWING No:	COST CENTRE:	SCALE	SHEET	CONT.	REV.
100241843	A PRELIMINARIES AND GENERAL REQUIREMENTS	N/S	7	8	9.0

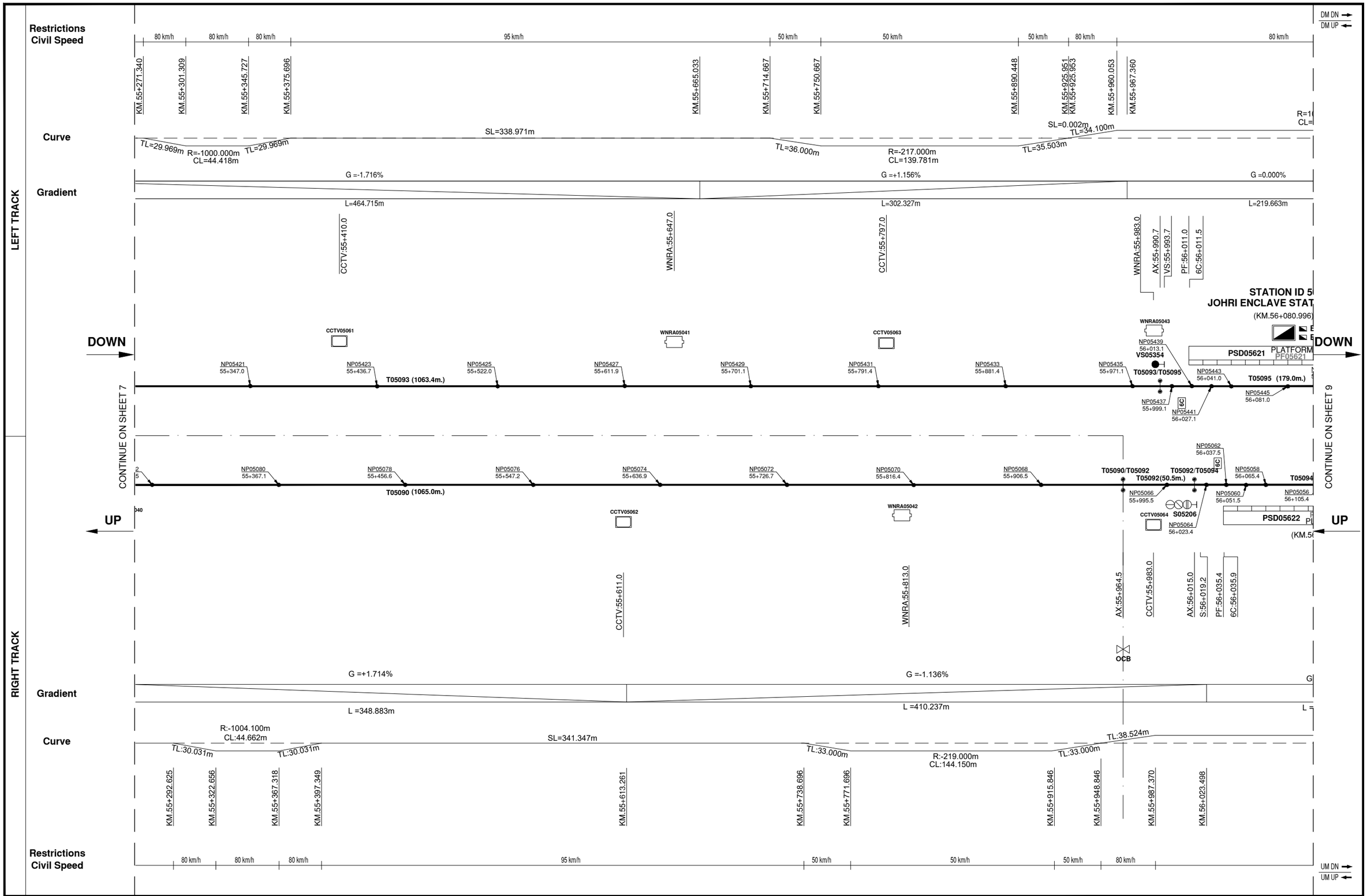

DELHI METRO RAIL CORPORATION LTD.
Metro Bhawan, Fire Brigade Lane, Barakhamba Road, New Delhi-110001

ORIGINATOR:
BOMBARDIER
the evolution of mobility

© 2021, Bombardier Inc.
All rights reserved.

AS-BUILT DRAWING

REV	DATE	DESCRIPTION
9.0	04-OCT-21	AS-BUILT DRAWING

	NAME	DATE
DESIGNED	SAMIKSHA S.	27-SEP-21
CHECKED	ASHOK K.	04-OCT-21
APPROVED	ROHIT T.	04-OCT-21

DRAWING TITLE: DELHI MRTS PROJECT PHASE III LINE 7
TRAIN CONTROL & SIGNALLING SYSTEM CONTRACT CS03
TRACK AND SIGNALLING PLAN LINE 7
GOKULPURI TO SHIV VIHAR STATION
SECTION - MJSV

DRAWING No:	COST CENTRE:	SCALE	SHEET	CONT.	REV.
100241843	A PRELIMINARIES AND GENERAL REQUIREMENTS	N/S	8	9	9.0

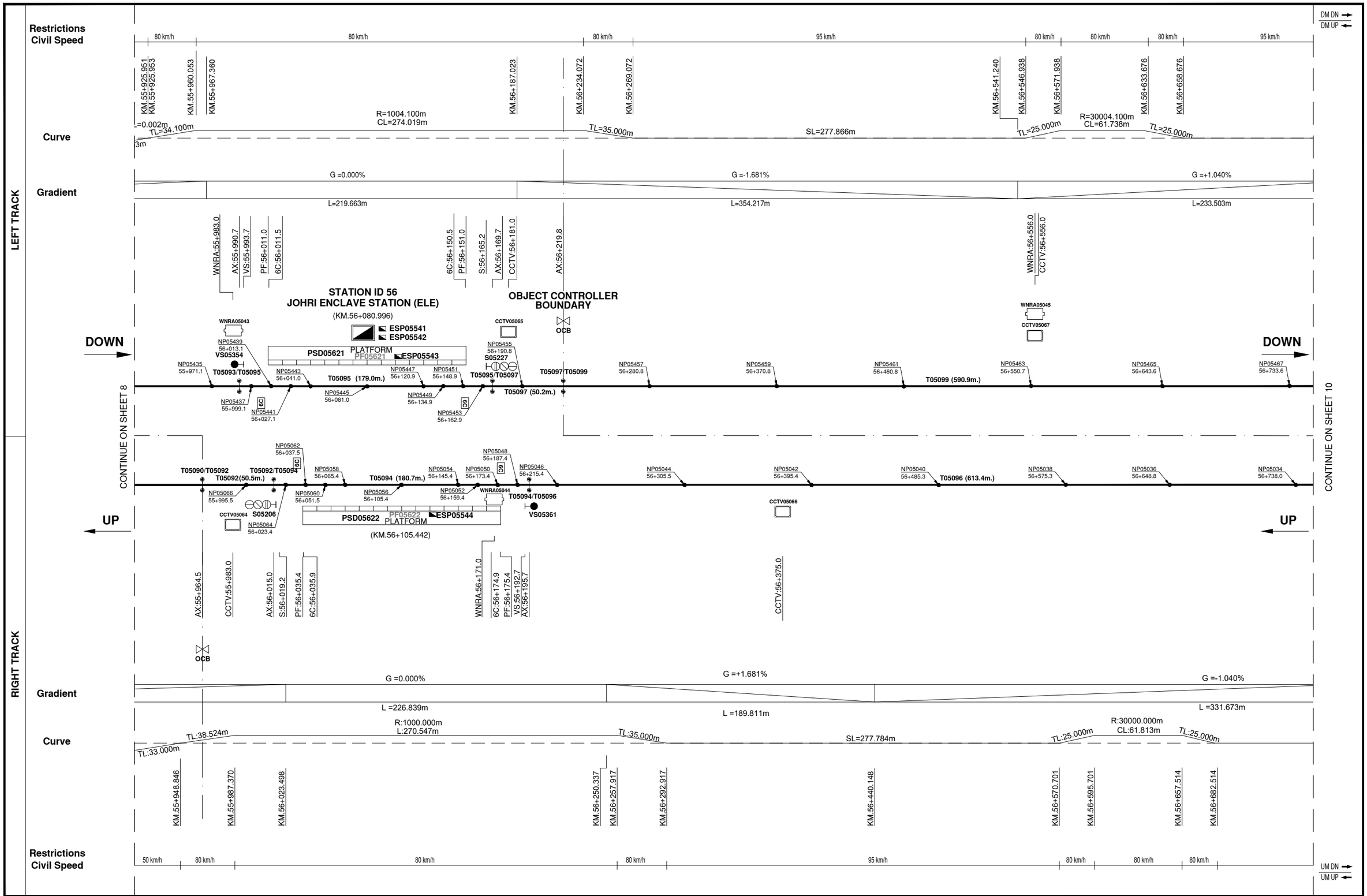

DELHI METRO RAIL CORPORATION LTD.
Metro Bhawan, Fire Brigade Lane, Barakhamba Road, New Delhi-110001

ORIGINATOR:
BOMBARDIER
the evolution of mobility

© 2021, Bombardier Inc.
All rights reserved.

AS-BUILT DRAWING

REV	DATE	DESCRIPTION
9.0	04-OCT-21	AS-BUILT DRAWING

	NAME	DATE
DESIGNED	SAMIKSHA S.	27-SEP-21
CHECKED	ASHOK K.	04-OCT-21
APPROVED	ROHIT T.	04-OCT-21

DRAWING TITLE: DELHI MRTS PROJECT PHASE III LINE 7
TRAIN CONTROL & SIGNALLING SYSTEM CONTRACT CS03
TRACK AND SIGNALLING PLAN LINE 7
GOKULPURI TO SHIV VIHAR STATION
SECTION - MJSV

DRAWING No:	COST CENTRE:	SCALE	SHEET	CONT.	REV.
100241843	A PRELIMINARIES AND GENERAL REQUIREMENTS	N/S	9	10	9.0

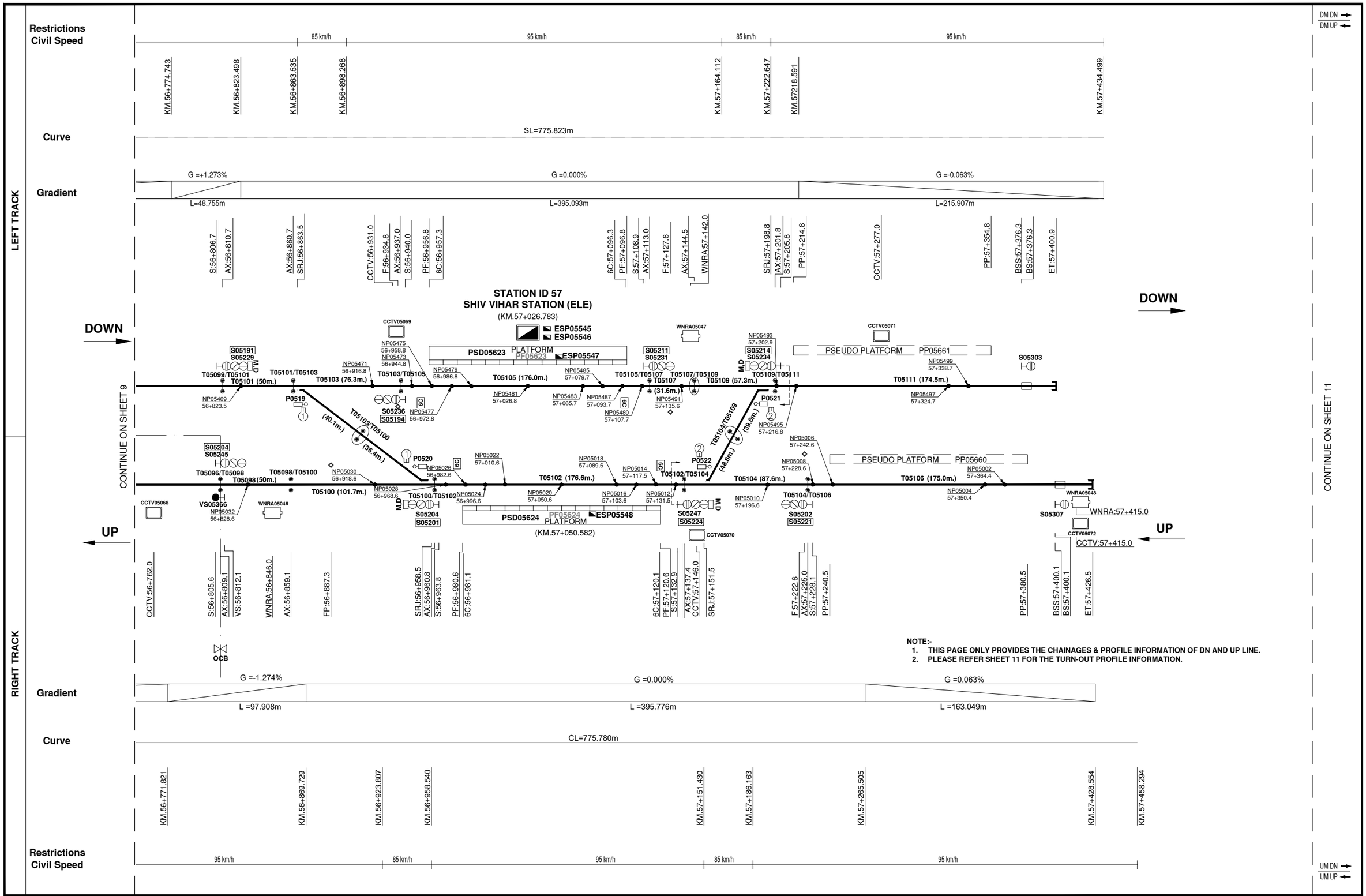

DELHI METRO RAIL CORPORATION LTD.
Metro Bhawan, Fire Brigade Lane, Barakhamba Road, New Delhi-110001

ORIGINATOR:
BOMBARDIER
the evolution of mobility

© 2021, Bombardier Inc.
All rights reserved.

AS-BUILT DRAWING

REV	DATE	DESCRIPTION
9.0	04-OCT-21	AS-BUILT DRAWING

	NAME	DATE
DESIGNED	SAMIKSHA S.	27-SEP-21
CHECKED	ASHOK K.	04-OCT-21
APPROVED	ROHIT T.	04-OCT-21

DRAWING TITLE: DELHI MRTS PROJECT PHASE III LINE 7
TRAIN CONTROL & SIGNALLING SYSTEM CONTRACT CS03
TRACK AND SIGNALLING PLAN LINE 7
GOKULPURI TO SHIV VIHAR STATION
SECTION - MJSV

DRAWING No:	COST CENTRE:	SCALE	SHEET	CONT.	REV.
100241843	A PRELIMINARIES AND GENERAL REQUIREMENTS	N/S	10	11	9.0

LEFT TRACK

Restrictions
Civil Speed

Curve

Gradient

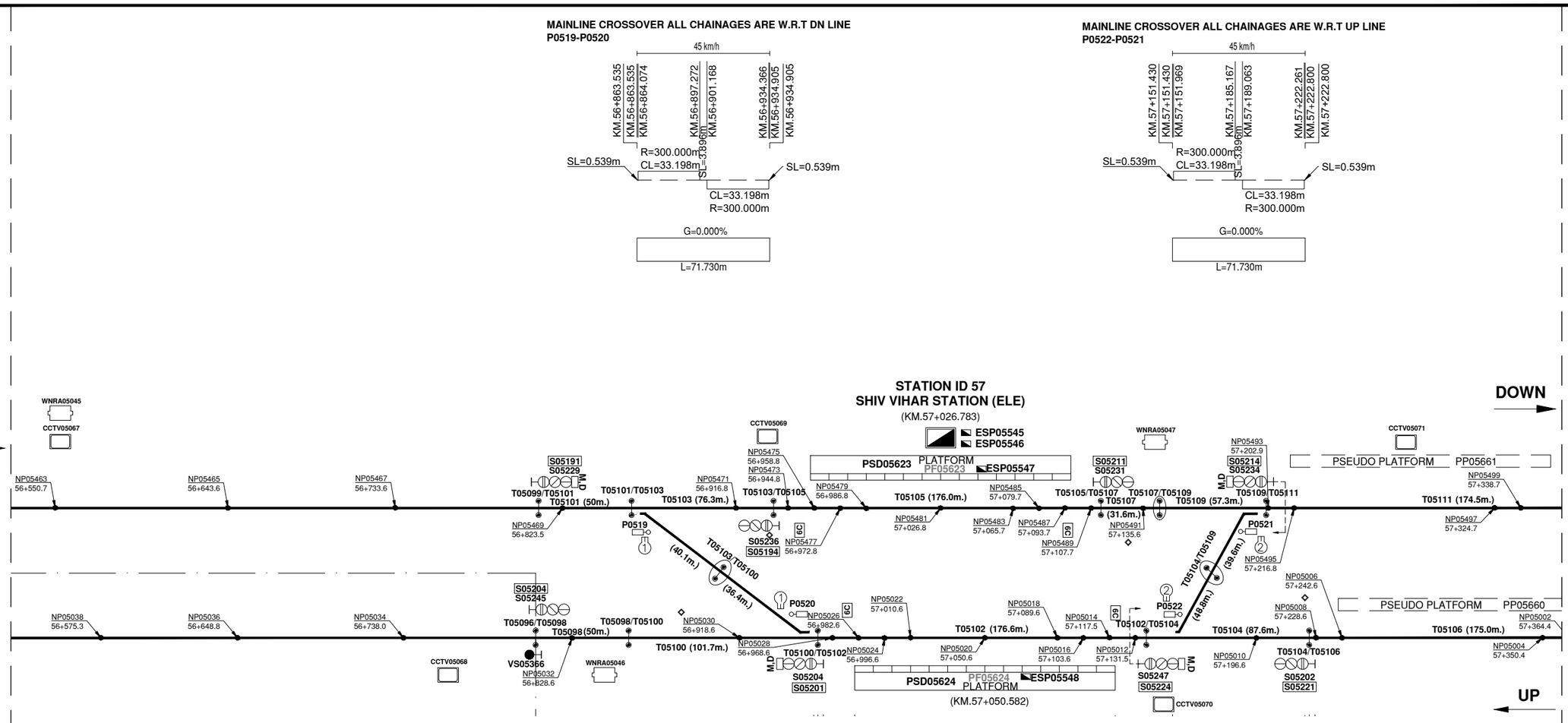

RIGHT TRACK

Gradient

Curve

Restrictions
Civil Speed

NOTE:-
1. THIS PAGE ONLY PROVIDES THE CHAINAGES & PROFILE INFORMATION OF SHIV VIHAR TURN-OUTS.
2. PLEASE REFER SHEET 10 FOR UP & DN LINE PROFILE INFORMATION.

UM DN
UM UP

DELHI METRO RAIL CORPORATION LTD.
Metro Bhawan, Fire Brigade Lane, Barakhamba Road, New Delhi-110001

ORIGINATOR:
BOMBARDIER
the evolution of mobility

© 2021, Bombardier Inc.
All rights reserved.

AS-BUILT DRAWING

REV	DATE	DESCRIPTION
9.0	04-OCT-21	AS-BUILT DRAWING

	NAME	DATE
DESIGNED	SAMIKSHA S.	27-SEP-21
CHECKED	ASHOK K.	04-OCT-21
APPROVED	ROHIT T.	04-OCT-21

DRAWING TITLE: DELHI MRTS PROJECT PHASE III LINE 7
TRAIN CONTROL & SIGNALLING SYSTEM CONTRACT CS03
TRACK AND SIGNALLING PLAN LINE 7
GOKULPURI TO SHIV VIHAR STATION
SECTION - MJSV

DRAWING No:	COST CENTRE:	SCALE	SHEET	CONT.	REV.
100241843	A PRELIMINARIES AND GENERAL REQUIREMENTS	N/S	11	-	9.0

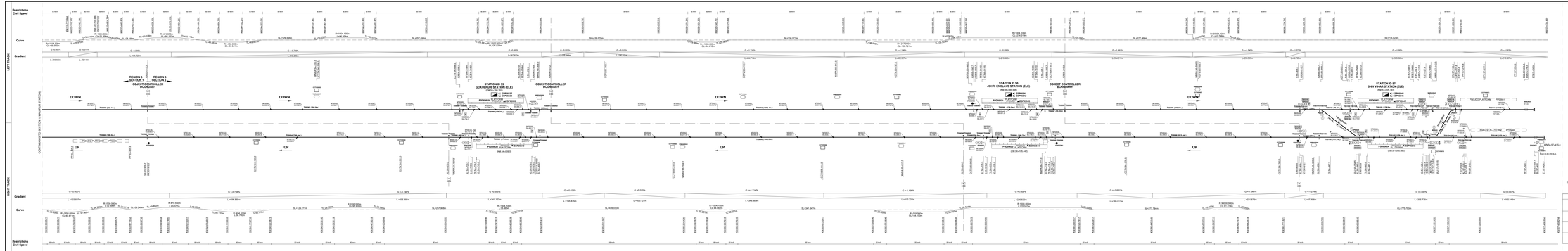

SYMBOLS USED IN THE TRACK AND SIGNALING PLAN

SYMBOL	DESCRIPTION	SYMBOL	DESCRIPTION	SYMBOL	DESCRIPTION
TRACK SECTION NAME / TRACK SECTION LENGTH	TRACK SECTION NAME: 1. BASE VERSION - 2. TRACK SECTION LENGTH: 1. BASE VERSION - 2. TRACK SECTION LENGTH	SIGNAL SYSTEM	SIGNAL SYSTEM: 1. BASE VERSION - 2. TRACK SYSTEM: 1. BASE VERSION - 2. TRACK SYSTEM	SIGNAL NAME	SIGNAL NAME: 1. BASE VERSION - 2. SIGNAL NAME: 1. BASE VERSION - 2. SIGNAL NAME
TRACK SECTION START CHAINAGE	TRACK SECTION START CHAINAGE: 1. BASE VERSION - 2. TRACK SECTION START CHAINAGE: 1. BASE VERSION	SIGNAL TYPE	SIGNAL TYPE: 1. BASE VERSION - 2. SIGNAL TYPE: 1. BASE VERSION	SIGNAL ASPECT	SIGNAL ASPECT: 1. BASE VERSION - 2. SIGNAL ASPECT: 1. BASE VERSION
TRACK SECTION END CHAINAGE	TRACK SECTION END CHAINAGE: 1. BASE VERSION - 2. TRACK SECTION END CHAINAGE: 1. BASE VERSION	SIGNAL ASPECT	SIGNAL ASPECT: 1. BASE VERSION - 2. SIGNAL ASPECT: 1. BASE VERSION	SIGNAL ASPECT	SIGNAL ASPECT: 1. BASE VERSION - 2. SIGNAL ASPECT: 1. BASE VERSION
MAX. LIMITED SPEED	MAX. LIMITED SPEED: 1. BASE VERSION - 2. MAX. LIMITED SPEED: 1. BASE VERSION	SIGNAL ASPECT	SIGNAL ASPECT: 1. BASE VERSION - 2. SIGNAL ASPECT: 1. BASE VERSION	SIGNAL ASPECT	SIGNAL ASPECT: 1. BASE VERSION - 2. SIGNAL ASPECT: 1. BASE VERSION
MAP SPEED	MAP SPEED: 1. BASE VERSION - 2. MAP SPEED: 1. BASE VERSION	SIGNAL ASPECT	SIGNAL ASPECT: 1. BASE VERSION - 2. SIGNAL ASPECT: 1. BASE VERSION	SIGNAL ASPECT	SIGNAL ASPECT: 1. BASE VERSION - 2. SIGNAL ASPECT: 1. BASE VERSION
TRACK SECTION NAME / TRACK SECTION LENGTH	TRACK SECTION NAME: 1. BASE VERSION - 2. TRACK SECTION LENGTH: 1. BASE VERSION - 2. TRACK SECTION LENGTH	SIGNAL ASPECT	SIGNAL ASPECT: 1. BASE VERSION - 2. SIGNAL ASPECT: 1. BASE VERSION	SIGNAL ASPECT	SIGNAL ASPECT: 1. BASE VERSION - 2. SIGNAL ASPECT: 1. BASE VERSION
TRACK SECTION START CHAINAGE	TRACK SECTION START CHAINAGE: 1. BASE VERSION - 2. TRACK SECTION START CHAINAGE: 1. BASE VERSION	SIGNAL ASPECT	SIGNAL ASPECT: 1. BASE VERSION - 2. SIGNAL ASPECT