DELHI MRTS PROJECT PHASE-IV LINE 7 EXTENSION

TRAIN CONTROL & SIGNALLING SYSTEM CONTRACT DS03-B

TRACK AND SIGNALLING PLAN LINE 7 EXTENSION YAMUNA VIHAR TO BURARI (MAINLINE)

DELHI METRO RAIL CORPORATION LTD.
N.B.C.C. PLACE, BHISHMA PITAMAH MARG, PRAGATI VIHAR, NEW DELHI-110003

ORIGINATOR:
ALSTOM
·mobility by nature·

REV	DATE	DESCRIPTION
7.0	23–MAY–25	RELEASED

	NAME	DATE
DESIGNED	SUVASHREE S.	20–MAY–25
CHECKED	ALISHA S.	21–MAY–25
VALIDATED	UTSAV J.	22–MAY–25
APPROVED	ASHOK K.	23–MAY–25

DRAWING TITLE:
DELHI MRTS PROJECT PHASE IV LINE 7 EXTENSION
TRAIN CONTROL & SIGNALLING SYSTEM CONTRACT DS03-B
TRACK AND SIGNALLING PLAN LINE 7 EXTENSION
YAMUNA VIHAR TO BURARI (MAINLINE)

DRAWING No:	COST CENTRE:	SCALE	SHEET	CONT.	REV.
100650339	B PRELIMINARIES AND GENERAL REQUIREMENTS	N/S	1	2	7.0

REF. VERSION	DESCRIPTION OF REFERENCE	Ref. Dwg./Doc.No.	Ref. Date	Remark
R6	GAD MAUJPUR TO MAJLIS PARK	LJKEC-AECOM-DC02-DWG-GAD-10201	11-FEB-25	
R5	20241111 GAD MAUJPUR TO MAJLIS PARK UP DN	LJKEC-AECOM-DC02-DWG-GAD-10201	11-NOV-24	
R4	GAD MAUJPUR TO MAJLIS PARK UP DN	LJKEC-AECOM-DC02-DWG-GAD-10201	23-MAR-22	-

REFERENCE INFORMATION

DELHI METRO RAIL CORPORATION LTD.
N.B.C.C. PLACE, BHISHMA PITAMAH MARG, PRAGATI VIHAR, NEW DELHI-110003

ORIGINATOR:
ALSTOM
•mobility by nature•

REV	DATE	DESCRIPTION
7.0	23–MAY–25	RELEASED

	NAME	DATE
DESIGNED	SUVASHREE S.	20–MAY–25
CHECKED	ALISHA S.	21–MAY–25
VALIDATED	UTSAV J.	22–MAY–25
APPROVED	ASHOK K.	23–MAY–25

DRAWING TITLE:
DELHI MRTS PROJECT PHASE IV LINE 7 EXTENSION
TRAIN CONTROL & SIGNALLING SYSTEM CONTRACT DS03-B
TRACK AND SIGNALLING PLAN LINE 7 EXTENSION
YAMUNA VIHAR TO BURARI (MAINLINE)

DRAWING No:	COST CENTRE:	SCALE	SHEET	CONT.	REV.
100650339	B PRELIMINARIES AND GENERAL REQUIREMENTS	N/S	2	3	7.0

REV.	REVISION INFORMATION	DESIGNER	VERIFIER-1	VERIFIER-2	Date
7.0	RELEASED	SUVASHREE S.	ALISHA S.	UTSAV J.	23-MAY-25
6.5	UPDATED AXLE COUNTER & SIGNAL CHAINAGES AS PER RECEIVED SITE SURVEY VERIFICATION REPORT	SUVASHREE S.	ALISHA S.	UTSAV J.	16-MAY-25
6.4	UPDATED NEUTRAL SECTION IN BOTH UP & DN LINE	SUVASHREE S.	ALISHA S.	UTSAV J.	02-APR-25
6.3	UPDATED SPEED DETAIL AS PER GAD MAUJPUR TO MAJLIS PARK UP DN_REV.-6	SUVASHREE S.	ALISHA S.	UTSAV J.	20-FEB-25
6.2	UPDATED CCTV & WNRA CHAINAGES AS PER WIRELESS(TRA)_LAYOUT_AND_FREQUENCY_PLAN_REV-0.6	SUVASHREE S.	ALISHA S.	UTSAV J.	13-JAN-25
	ADDED NEW LENGTH & GRADIENT				
6.1	UPDATED KM , LENGTH & GRADIENT AS PER 20241111 GAD MAUJPUR TO MAJLIS PARK UP DN_REV.-5	SUVASHREE S.	ALISHA S.	UTSAV J.	23-DEC-24
	ADDED WNRA11050,WNRA11051,CCTV11074				
	UPDATED WNRA11048 , CCTV11072,WNRA11049 AND CCTV11073 CHAINAGES				
6.0	RELEASED	SUVASHREE S.	MONIKA Y.	UTSAV J.	24-OCT-24
5.1	UPDATED NORMING POINT POSITION & CHAINAGES AS PER RECEIVED MAP INPUT ON DATE-- 09-OCT-2024	SUVASHREE S.	MONIKA Y.	UTSAV J.	09-OCT-24
5.0	RELEASED	SUVASHREE S.	ALISHA S.	UTSAV J.	05-SEP-24
4.2	ADDED DOUBLE AXLE HEAD BETWEEN REGION-11 & REGION-5 BOUNDARY	SUVASHREE S.	ALISHA S.	UTSAV J.	26-AUG-24
	UPDATED OLD CBTC SIGNAL NUMBER OF (S11210,S11219 & S11221) TO NEW				
	UPDATED NORMING POINT NAME (NP11389,NP11391,NP11393,NP11395,NP11397,NP11399 & NP11401) TO NEW				
	ADDED POINT PROFILE AT SHEET No- 17				
	ADDED SYMBOL FOR CYCLE C1101, C1102, C1103 & C1104				
4.1	UPDATED GRADIENT CHAINAGE FOR UP LINE	ALISHA S.	ADITYA J.	ADITYA S.	19-JUN-24
	UPDATED TRACK LENGTH FOR T11061 AND T11062				
4.0	RELEASED	ALISHA S.	ADITYA J.	ADITYA S.	24-MAY-24
3.4	UPDATED AX CHAINAGE AT THE BOUNDARY OF REGION 5 AND REGION 11 FOR UP AND DOWN LINE	ALISHA S.	ADITYA J.	ADITYA S.	13-MAR-24
3.3	UPDATED CROSSOVER TRACK SECTION CHAINAGES BETWEEN P1101 AND P1106 & P1103 AND P1104	ALISHA S.	ADITYA J.	ADITYA S.	06-MAR-24
3.2	UPDATED FEW WAYSIDE CHAINAGES AND MARKED WITH RED CLOUD	ALISHA S.	ADITYA J.	ADITYA S.	28-FEB-24
	UPDATED FM CHAINAGE AS PER GAD LJKEC-AECOM-DC02-DWG-GAD-10201				
3.1	UPDATED CURVE AND SPEED AND MARKED WITH RED CLOUD	ALISHA S.	ADITYA J.	ADITYA S.	05-FEB-24
3.0	RELEASED	ALISHA S.	ADITYA J.	ADITYA S.	23-JAN-24
2.2	UPDATED AS PER REVIEWER'S COMMENT	ALISHA S.	ADITYA J.	ADITYA S.	17-JAN-24
	UPDATED UP LINE AND DOWN LINE VIRTUAL SIGNAL NAME				
	UPDATED REGION 5 BOUNDARY SIGNAL NAME VS11351 & VS11353 TO VS05365 & VS05367 RESPECTIVELY				
	UPDATED REGION 1 BOUNDARY SIGNAL NAME VS11366 & VS11354 TO VS01362 & VS01364 RESPECTIVELY				
	UPDATED POINT NAME P1106 TO P1102, P1102 TO P1104, P1104 TO P1106 & P1105 TO P1108				
	UPDATED TRACK NAME T11064 TO T11066 & T11066 TO T11064				
	UPDATED AXLE COUNTER NAME T11066/T11064 TO T11064/T11066 & T11064/T11028 TO T11066/T11028				
2.1	UPDATED SIGNAL NAME FOR UP LINE	ALISHA S.	ADITYA J.	ADITYA S.	15-JAN-24
2.0	RELEASED	ALISHA S.	GEETIKA S.	ADITYA S.	01-AUG-23
1.1	UPDATED AS PER CUSTOMER COMMENTS	ALISHA S.	GEETIKA S.	ADITYA S.	11-JUL-23
	-UPDATED AS PER 20230419 GAD MAUJPUR TO MAJLIS PARK UP DN				
1.0	RELEASED	ALISHA S.	ADITYA S.	ASHOK K.	29-MAY-23
0.2	UPDATE AS PER REVIEW COMMENTS	ALISHA S.	ADITYA S.	ASHOK K.	11-MAY-23
0.1	INITIAL DRAFT	ALISHA S.	ADITYA S.	ASHOK K.	11-APR-23

REVISION INFORMATION

DELHI METRO RAIL CORPORATION LTD.
N.B.C.C. PLACE, BHISHMA PITAMAH MARG, PRAGATI VIHAR, NEW DELHI-110003

ORIGINATOR:
ALSTOM
•mobility by nature•

REV	DATE	DESCRIPTION
7.0	23–MAY–25	RELEASED

	NAME	DATE
DESIGNED	SUVASHREE S.	20–MAY–25
CHECKED	ALISHA S.	21–MAY–25
VALIDATED	UTSAV J.	22–MAY–25
APPROVED	ASHOK K.	23–MAY–25

DRAWING TITLE:
DELHI MRTS PROJECT PHASE IV LINE 7 EXTENSION
TRAIN CONTROL & SIGNALLING SYSTEM CONTRACT DS03-B
TRACK AND SIGNALLING PLAN LINE 7 EXTENSION
YAMUNA VIHAR TO BURARI (MAINLINE)

DRAWING No:	COST CENTRE:	SCALE	SHEET	CONT.	REV.
100650339	B PRELIMINARIES AND GENERAL REQUIREMENTS	N/S	3	4	7.0

SYMBOLS USED IN THE TRACK AND SIGNALLING PLAN

SYMBOL	DESCRIPTION
1 SXXYYY M.D.S.T FOR ELEVATED SXXYYY SXXYYY M.D.S.T FOR UNDERGROUND (WALL MOUNT) SXXYYY	ROUTE INDICATOR — M FOR MAIN LINE, D FOR FIRST DIVERSION, S FOR SECOND DIVERSION, T FOR THIRD DIVERSION GREEN ASPECT VIOLET ASPECT RED ASPECT 3 – ASPECT SIGNAL "XX" = REGION NO. "YYY" = OBJECT NUMBERING (201–300)
2 SXXXXY SAABBB M.D.S.T	POINT PROTECTION SIGNAL "XXXX" = POINT NO. "Y" = DIRECTION OF TRAVEL "AA" = REGION NO. "BBB" = OBJECT NUMBERING (201–300)
3 SXXYYY	SHUNT SIGNAL "XX" = REGION NO. "YYY" = OBJECT NUMBERING (301–500)
4 SXXYYY	DEPENDENT SHUNT SIGNAL "XX" = REGION NO. "YYY" = OBJECT NUMBERING (301–500)
5 SXXYYY FOR ELEVATED/GROUND SXXYYY FOR UNDERGROUND (WALL MOUNT)	BUFFER STOP SIGNAL "XX" = REGION NO. "YYY" = OBJECT NUMBERING (301–350) FOR MAINLINE "YYY" = OBJECT NUMBERING (501–600) FOR DEPOT
6 VSXXYYY	VIRTUAL SIGNAL "XX" = REGION NO. "YYY" = OBJECT NUMBERING (351–400) FOR MAINLINE "YYY" = OBJECT NUMBERING (601–700) FOR DEPOT
7 PXXYY	POINT MACHINE "XX" = REGION NO. "YY" = OBJECT NUMBERING (01–99) = EEA–5 (MAIN LINE) = RDL2 (DEPOT)
8	FOULING POINT (POSITION SHALL BE CONFIRMED AT SITE)
9	ELECTRICAL KEY TRANSMITTER "X" = EKT GROUP NUMBER (I.E. EKT#1 FOR GROUP NO.1) NOTE: STARTING NUMBER "1" IN EVERY STATION
10 TXXYYY	AXLE COUNTER SECTION "XX" = REGION NO. "YYY" = OBJECT NUMBERING (001–200) FOR MAINLINE "YYY" = OBJECT NUMBERING (001–300) FOR DEPOT
11 TXXYYY/TXXYYY	AXLE COUNTER AXLE COUNTER LOCATED WITHIN FOULING AREA

SYMBOL	DESCRIPTION
12	NEUTRAL SECTION
13	BUFFER STOP AND END OF TRACK
14 85 km/h CIVIL SPEED	FROM CIVIL ENGINEERING POINT OF VIEW THE LIMITATION SPEED IS 85 km/h
15 1.500% L=100m	GRADIENT 1.5 GRADIENT LENGTH IS 100 (m)
16 R= 400.000 m L= 800.000 m	CURVE RADIUS IS 400 m CURVE LENGTH IS 800 m
17 KM. 9+911	MILEAGE IS 9911 (m)
18 ITI & OCB	ITI : INTERLOCKING TO INTERLOCKING BORDER (REGION BORDER) & OBJECT CONTROLLER TO OBJECT CONTROLLER BOUNDARY
19 DOWN UP	NORMAL DIRECTION OF TRAFFIC
20	STATION WITH CBI AND OC
21	STATION WITH OC
22 ESPXXYYY	EMERGENCY STOP PLUNGER (ESP) "XX" = REGION NO. "YYY" = OBJECT NUMBERING (501–600) FOR MAINLINE "YYY" = OBJECT NUMBERING (701–750) FOR DEPOT
23 PLATFORM PFXXYYY	PLATFORM "XX" = REGION NO. "YYY" = OBJECT NUMBERING (601–650) FOR MAINLINE "YYY" = OBJECT NUMBERING (751–800) FOR DEPOT
24 PSEUDO PPXXYYY	PSEUDO PLATFORM "XX" = REGION NO. "YYY" = OBJECT NUMBERING (651–700) FOR MAINLINE "YYY" = OBJECT NUMBERING (801–850) FOR DEPOT

SYMBOL	DESCRIPTION
25	NORMING POINT "XX" = REGION No. "YYY" = OBJECT NUMBERING (001–999)
26 WNRAXXYYY	PAIR OF WAYSIDE NETWORK RADIO ASSEMBLY (WNRA) "XX" = REGION NO. "YYY" = OBJECT NUMBERING (001–200) FOR MAINLINE "YYY" = OBJECT NUMBERING (701–900) FOR DEPOT
27 CCTVXXYYY	PAIR OF CLOSED CIRCUIT TELEVISION (CCTV) "XX" = REGION NO. "YYY" = OBJECT NUMBERING (001–200) FOR MAINLINE "YYY" = OBJECT NUMBERING (701–900) FOR DEPOT
28	SINGLE OF LINE–OF–SIGHT (LOS) ANTENNA
29	PAIR OF LINE–OF–SIGHT (LOS) ANTENNA
30	LEAKY FEEDER CABLE
31 AE	ATC ENDS MARKER BOARD
32 AB	ATC BEGINS MARKER BOARD
33 XC	NORMAL STOPPING MARKER BOARD XC = NUMBER OF CAR
34 SR XC FOR MAINLINE	SR = STOPPING REVERSE MARKER BOARD XC = NUMBER OF CAR
35 STOP	STOP BOARD
36	TRAP POINT
37 OCB	OCB : OBJECT CONTROLLER TO OBJECT CONTROLLER (BOUNDARY)
38 PSDXXYYY FOR MAINLINE PSDXXYYY FOR DEPOT	PLATFORM SCREEN DOOR "XX" = REGION NO. "YYY" = OBJECT NUMBERING (601–650) FOR MAINLINE "YYY" = OBJECT NUMBERING (801–850) FOR DEPOT

DELHI METRO RAIL CORPORATION LTD.
N.B.C.C. PLACE, BHISHMA PITAMAH MARG, PRAGATI VIHAR, NEW DELHI-110003

ORIGINATOR: ALSTOM ·mobility by nature·

REV	DATE	DESCRIPTION
7.0	23–MAY–25	RELEASED

	NAME	DATE
DESIGNED	SUVASHREE S.	20–MAY–25
CHECKED	ALISHA S.	21–MAY–25
VALIDATED	UTSAV J.	22–MAY–25
APPROVED	ASHOK K.	23–MAY–25

DRAWING TITLE:
DELHI MRTS PROJECT PHASE IV LINE 7 EXTENSION
TRAIN CONTROL & SIGNALLING SYSTEM CONTRACT DS03-B
TRACK AND SIGNALLING PLAN LINE 7 EXTENSION
YAMUNA VIHAR TO BURARI (MAINLINE)

DRAWING No:	COST CENTRE:	SCALE	SHEET	CONT.	REV.
100650339	B PRELIMINARIES AND GENERAL REQUIREMENTS	N/S	4	5	7.0

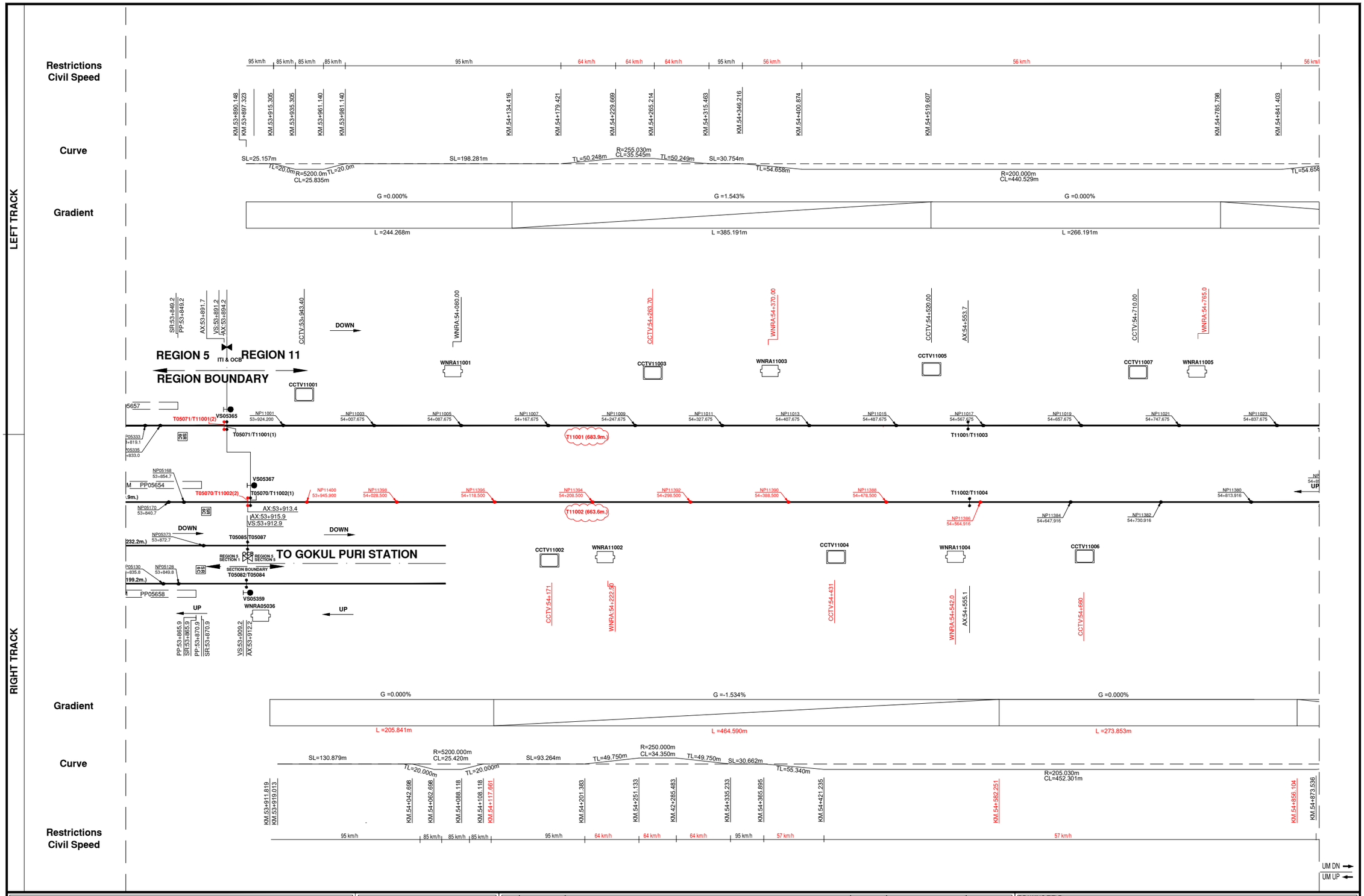

DELHI METRO RAIL CORPORATION LTD.
N.B.C.C. PLACE, BHISHMA PITAMAH MARG, PRAGATI VIHAR, NEW DELHI-110003

ORIGINATOR: ALSTOM ·mobility by nature·

REV	DATE	DESCRIPTION
7.0	23-MAY-25	RELEASED

	NAME	DATE
DESIGNED	SUVASHREE S.	20-MAY-25
CHECKED	ALISHA S.	21-MAY-25
VALIDATED	UTSAV J.	22-MAY-25
APPROVED	ASHOK K.	23-MAY-25

DRAWING TITLE:
DELHI MRTS PROJECT PHASE IV LINE 7 EXTENSION
TRAIN CONTROL & SIGNALLING SYSTEM CONTRACT DS03-B
TRACK AND SIGNALLING PLAN LINE 7 EXTENSION
YAMUNA VIHAR TO BURARI (MAINLINE)

DRAWING No:	COST CENTRE:	SCALE	SHEET	CONT.	REV.
100650339	B PRELIMINARIES AND GENERAL REQUIREMENTS	N/S	5	6	7.0

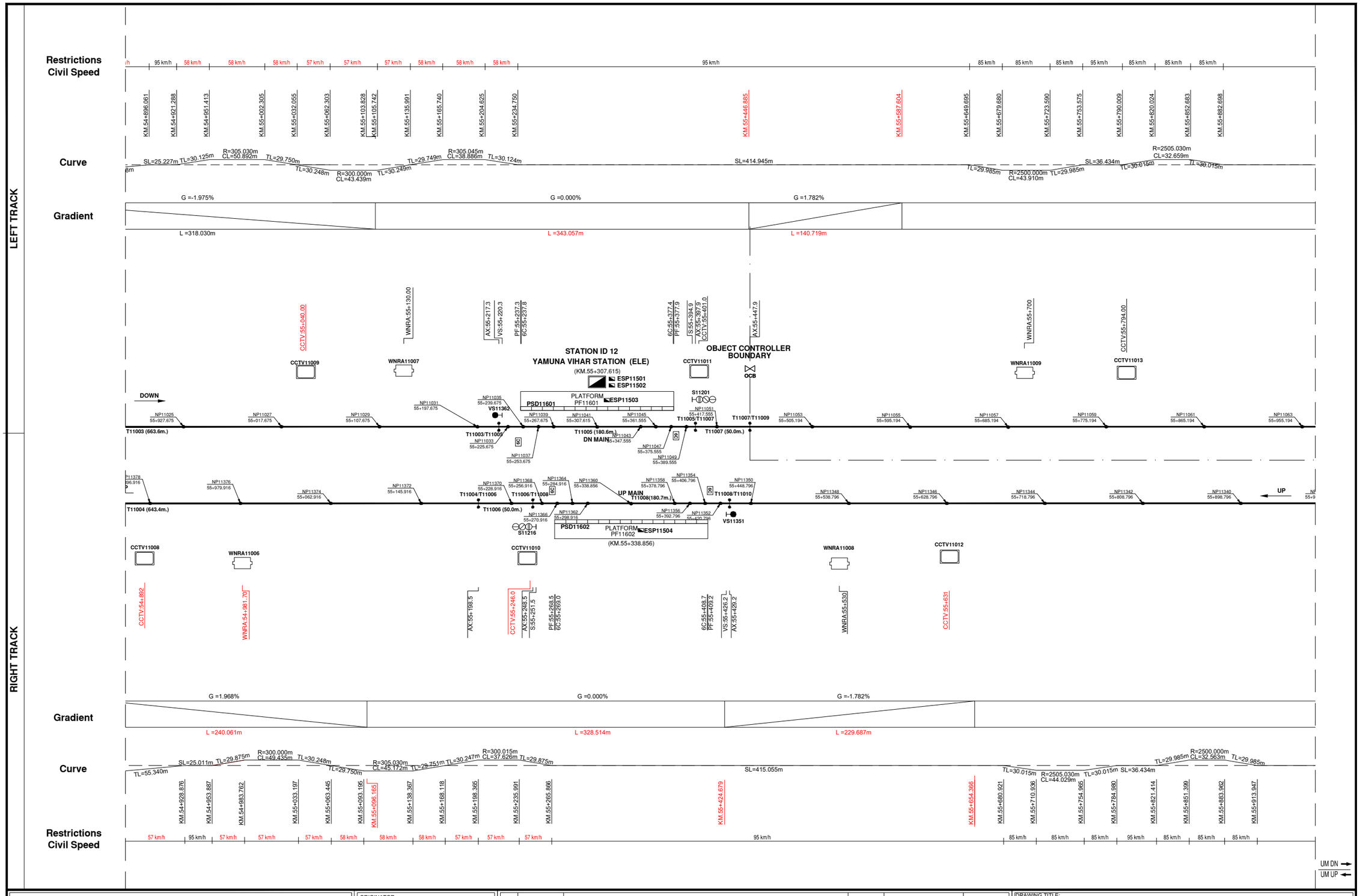

DELHI METRO RAIL CORPORATION LTD.
N.B.C.C. PLACE, BHISHMA PITAMAH MARG, PRAGATI VIHAR, NEW DELHI-110003

ORIGINATOR:
ALSTOM
•mobility by nature•

REV	DATE	DESCRIPTION
7.0	23-MAY-25	RELEASED

	NAME	DATE
DESIGNED	SUVASHREE S.	20-MAY-25
CHECKED	ALISHA S.	21-MAY-25
VALIDATED	UTSAV J.	22-MAY-25
APPROVED	ASHOK K.	23-MAY-25

DRAWING TITLE:
DELHI MRTS PROJECT PHASE IV LINE 7 EXTENSION
TRAIN CONTROL & SIGNALLING SYSTEM CONTRACT DS03-B
TRACK AND SIGNALLING PLAN LINE 7 EXTENSION
YAMUNA VIHAR TO BURARI (MAINLINE)

DRAWING No:	COST CENTRE:	SCALE	SHEET	CONT.	REV.
100650339	B PRELIMINARIES AND GENERAL REQUIREMENTS	N/S	6	7	7.0

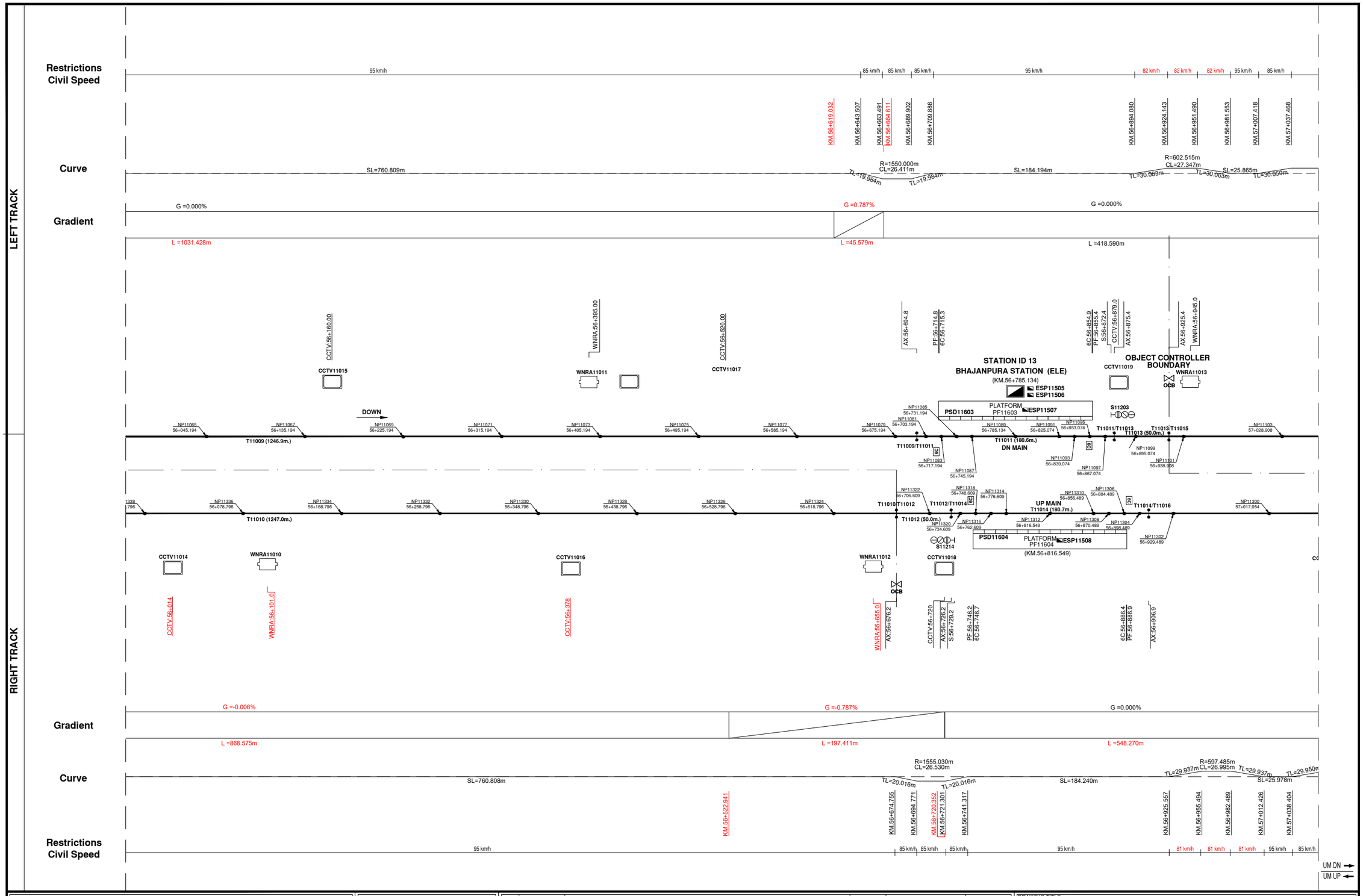

DELHI METRO RAIL CORPORATION LTD.
N.B.C.C. PLACE, BHISHMA PITAMAH MARG, PRAGATI VIHAR, NEW DELHI-110003

ORIGINATOR:
ALSTOM
•mobility by nature•

REV	DATE	DESCRIPTION
7.0	23-MAY-25	RELEASED

	NAME	DATE
DESIGNED	SUVASHREE S.	20-MAY-25
CHECKED	ALISHA S.	21-MAY-25
VALIDATED	UTSAV J.	22-MAY-25
APPROVED	ASHOK K.	23-MAY-25

DRAWING TITLE:
DELHI MRTS PROJECT PHASE IV LINE 7 EXTENSION
TRAIN CONTROL & SIGNALLING SYSTEM CONTRACT DS03-B
TRACK AND SIGNALLING PLAN LINE 7 EXTENSION
YAMUNA VIHAR TO BURARI (MAINLINE)

DRAWING No:	COST CENTRE:	SCALE	SHEET	CONT.	REV.
100650339	B PRELIMINARIES AND GENERAL REQUIREMENTS	N/S	7	8	7.0

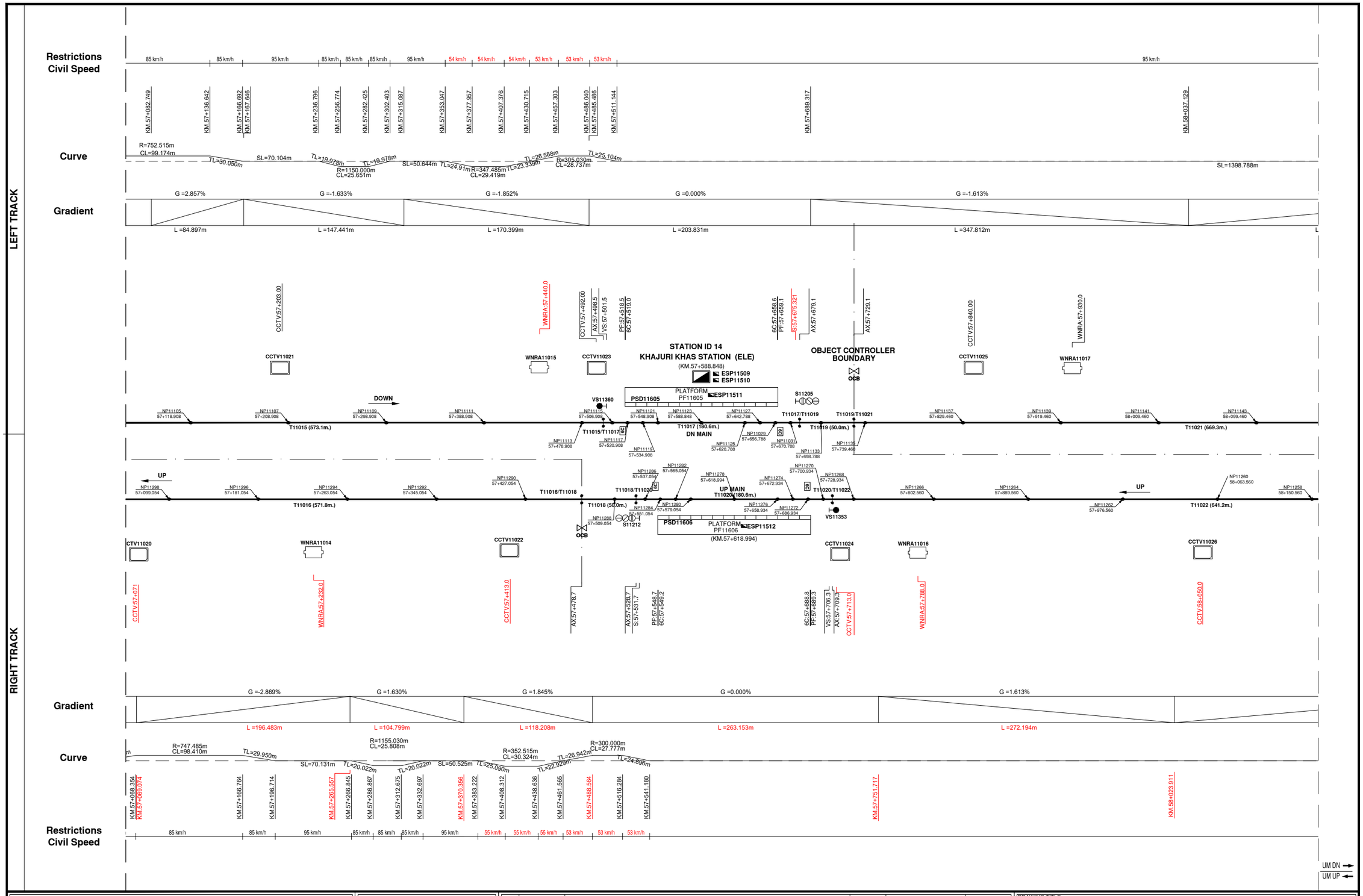

DELHI METRO RAIL CORPORATION LTD.
N.B.C.C. PLACE, BHISHMA PITAMAH MARG, PRAGATI VIHAR, NEW DELHI-110003

ORIGINATOR:
ALSTOM
•mobility by nature•

REV	DATE	DESCRIPTION
7.0	23–MAY–25	RELEASED

	NAME	DATE
DESIGNED	SUVASHREE S.	20–MAY–25
CHECKED	ALISHA S.	21–MAY–25
VALIDATED	UTSAV J.	22–MAY–25
APPROVED	ASHOK K.	23–MAY–25

DRAWING TITLE:
DELHI MRTS PROJECT PHASE IV LINE 7 EXTENSION
TRAIN CONTROL & SIGNALLING SYSTEM CONTRACT DS03-B
TRACK AND SIGNALLING PLAN LINE 7 EXTENSION
YAMUNA VIHAR TO BURARI (MAINLINE)

DRAWING No:	COST CENTRE:	SCALE	SHEET	CONT.	REV.
100650339	B PRELIMINARIES AND GENERAL REQUIREMENTS	N/S	8	9	7.0

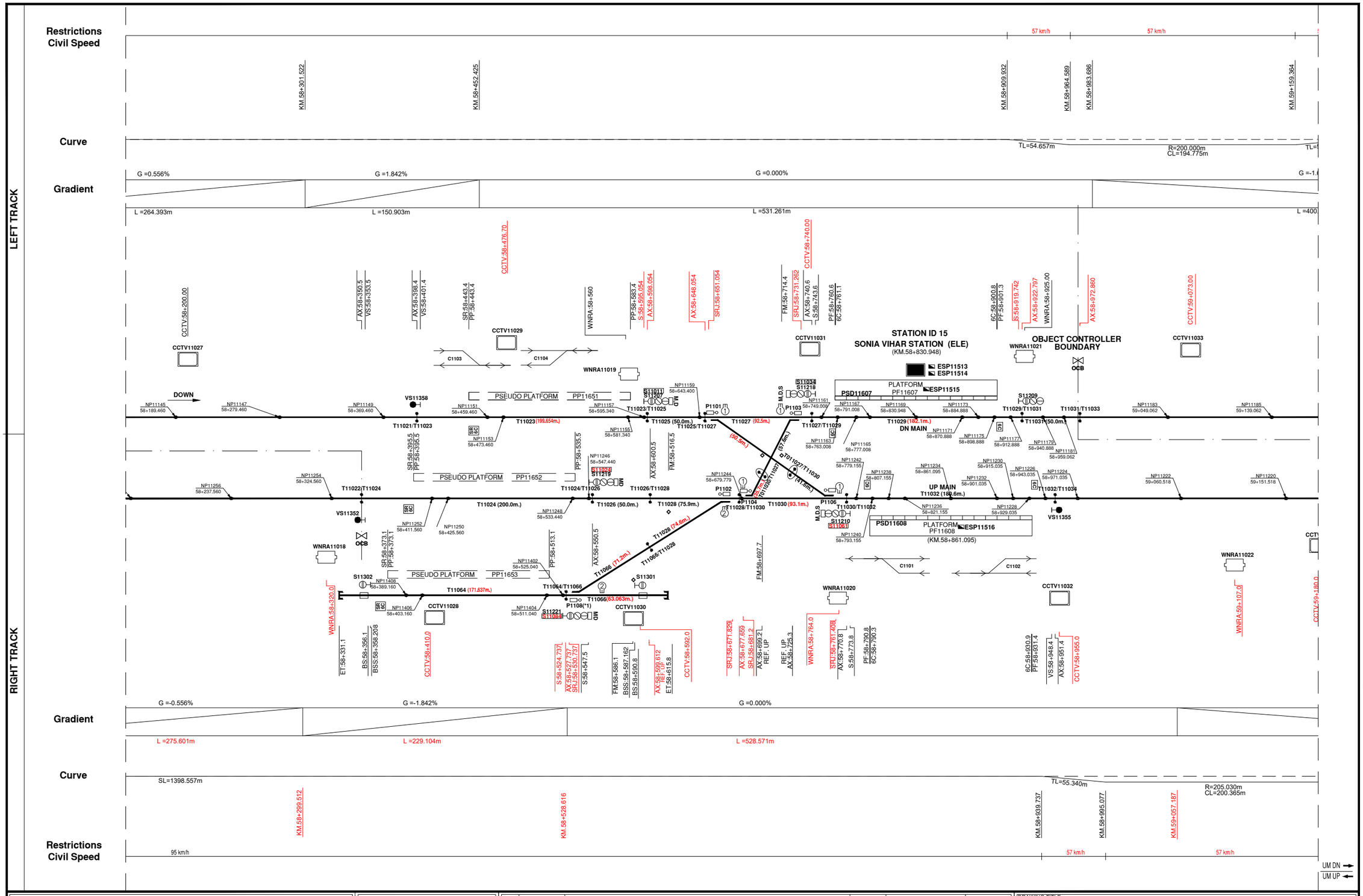

DELHI METRO RAIL CORPORATION LTD.
N.B.C.C. PLACE, BHISHMA PITAMAH MARG, PRAGATI VIHAR, NEW DELHI-110003

ORIGINATOR:
ALSTOM
•mobility by nature•

REV	DATE	DESCRIPTION
7.0	23-MAY-25	RELEASED

	NAME	DATE
DESIGNED	SUVASHREE S.	20-MAY-25
CHECKED	ALISHA S.	21-MAY-25
VALIDATED	UTSAV J.	22-MAY-25
APPROVED	ASHOK K.	23-MAY-25

DRAWING TITLE:
DELHI MRTS PROJECT PHASE IV LINE 7 EXTENSION
TRAIN CONTROL & SIGNALLING SYSTEM CONTRACT DS03-B
TRACK AND SIGNALLING PLAN LINE 7 EXTENSION
YAMUNA VIHAR TO BURARI (MAINLINE)

DRAWING No:	COST CENTRE:	SCALE	SHEET	CONT.	REV.
100650339	B PRELIMINARIES AND GENERAL REQUIREMENTS	N/S	9	10	7.0



DELHI METRO RAIL CORPORATION LTD.
N.B.C.C. PLACE, BHISHMA PITAMAH MARG, PRAGATI VIHAR, NEW DELHI-110003

ORIGINATOR:
ALSTOM
•mobility by nature•

REV	DATE	DESCRIPTION
7.0	23-MAY-25	RELEASED

	NAME	DATE
DESIGNED	SUVASHREE S.	20-MAY-25
CHECKED	ALISHA S.	21-MAY-25
VALIDATED	UTSAV J.	22-MAY-25
APPROVED	ASHOK K.	23-MAY-25

DRAWING TITLE:
DELHI MRTS PROJECT PHASE IV LINE 7 EXTENSION
TRAIN CONTROL & SIGNALLING SYSTEM CONTRACT DS03-B
TRACK AND SIGNALLING PLAN LINE 7 EXTENSION
YAMUNA VIHAR TO BURARI (MAINLINE)

DRAWING No:	COST CENTRE:	SCALE	SHEET	CONT.	REV.
100650339	B PRELIMINARIES AND GENERAL REQUIREMENTS	N/S	10	11	7.0

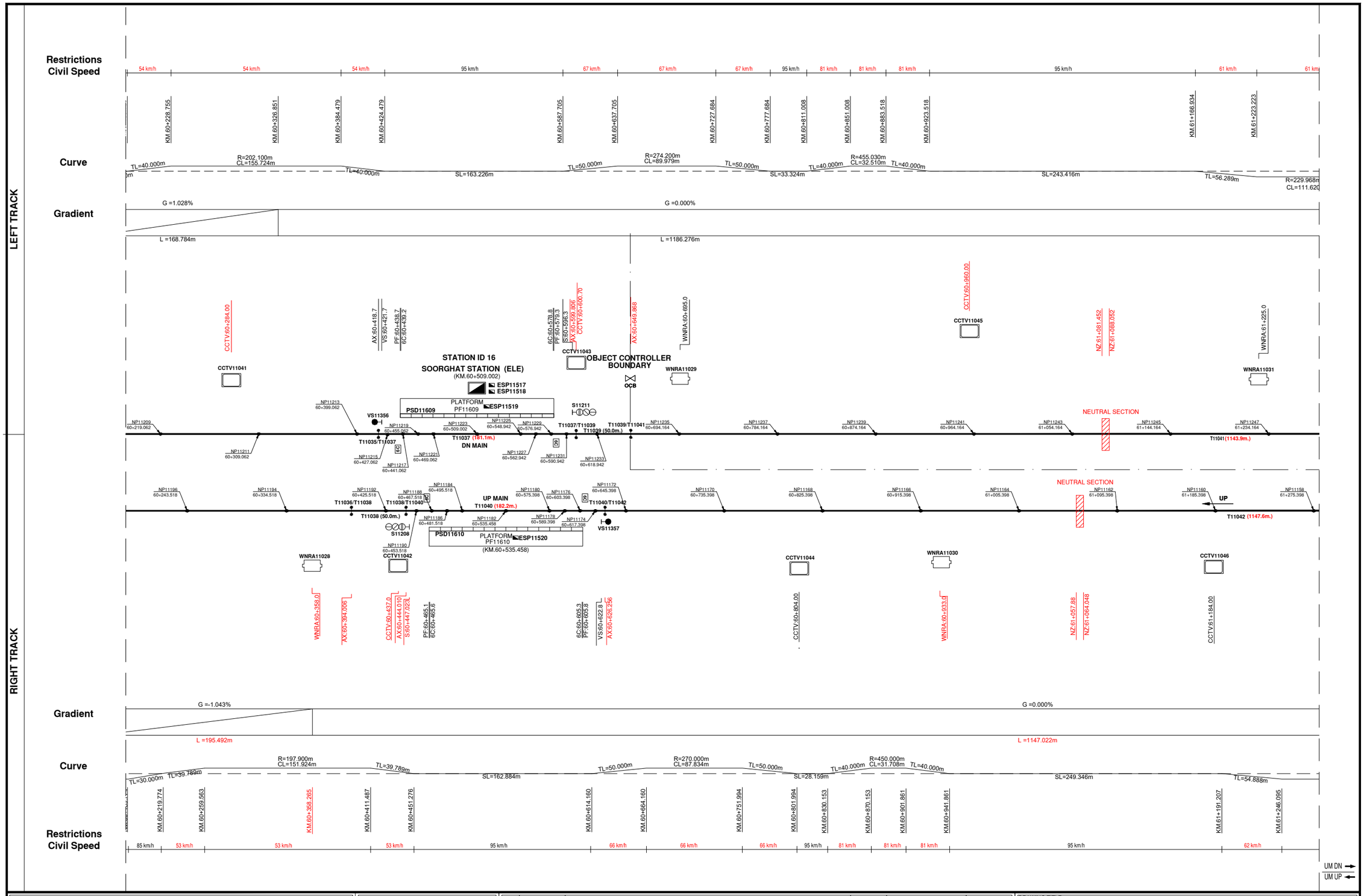

DELHI METRO RAIL CORPORATION LTD.
N.B.C.C. PLACE, BHISHMA PITAMAH MARG, PRAGATI VIHAR, NEW DELHI-110003

ORIGINATOR: ALSTOM ·mobility by nature·

REV	DATE	DESCRIPTION
7.0	23-MAY-25	RELEASED

	NAME	DATE
DESIGNED	SUVASHREE S.	20-MAY-25
CHECKED	ALISHA S.	21-MAY-25
VALIDATED	UTSAV J.	22-MAY-25
APPROVED	ASHOK K.	23-MAY-25

DRAWING TITLE:
DELHI MRTS PROJECT PHASE IV LINE 7 EXTENSION
TRAIN CONTROL & SIGNALLING SYSTEM CONTRACT DS03-B
TRACK AND SIGNALLING PLAN LINE 7 EXTENSION
YAMUNA VIHAR TO BURARI (MAINLINE)

DRAWING No:	COST CENTRE:	SCALE	SHEET	CONT.	REV.
100650339	B PRELIMINARIES AND GENERAL REQUIREMENTS	N/S	11	12	7.0

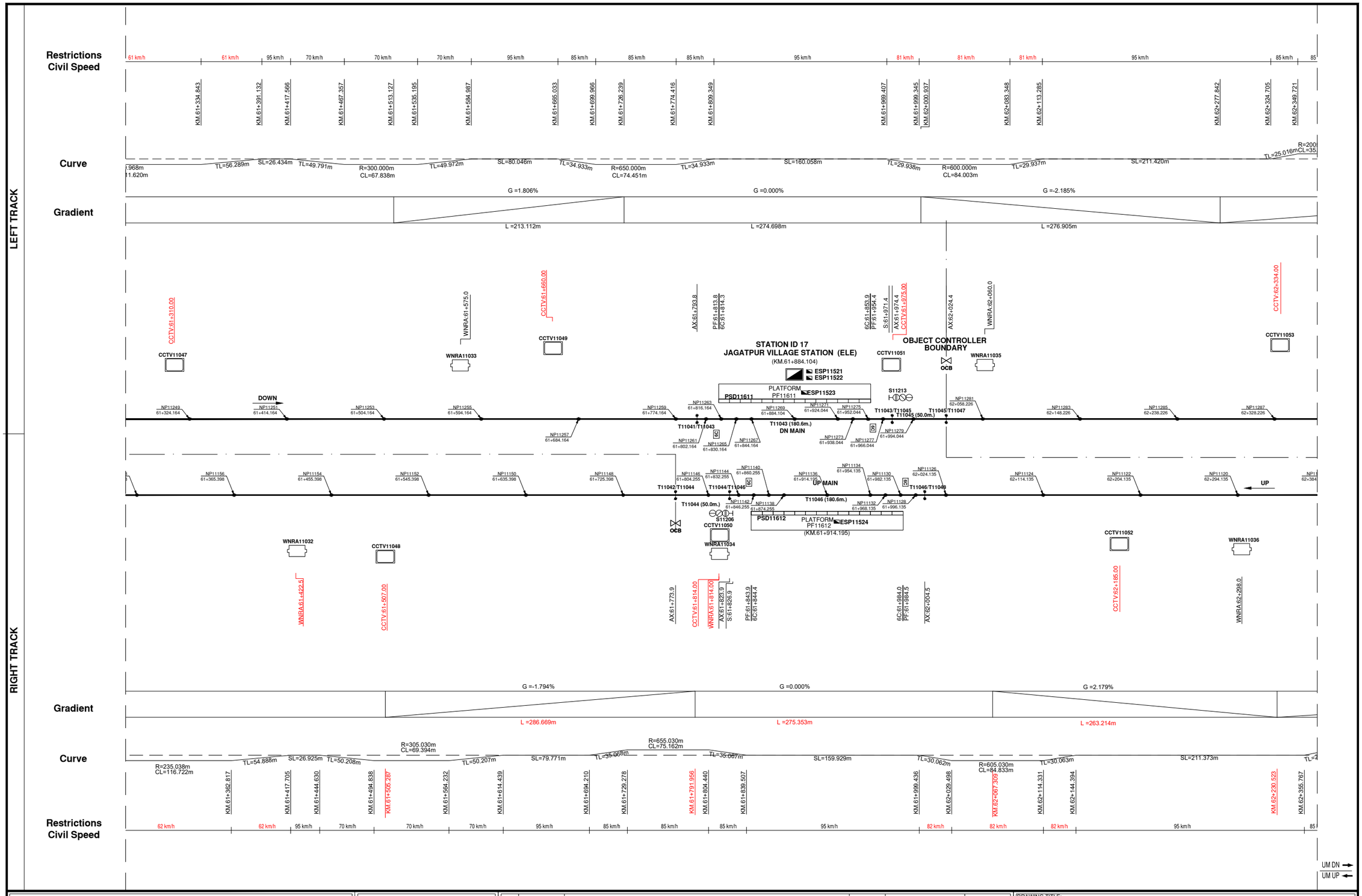

DELHI METRO RAIL CORPORATION LTD.
N.B.C.C. PLACE, BHISHMA PITAMAH MARG, PRAGATI VIHAR, NEW DELHI-110003

ORIGINATOR:
ALSTOM
•mobility by nature•

REV	DATE	DESCRIPTION
7.0	23–MAY–25	RELEASED

	NAME	DATE
DESIGNED	SUVASHREE S.	20–MAY–25
CHECKED	ALISHA S.	21–MAY–25
VALIDATED	UTSAV J.	22–MAY–25
APPROVED	ASHOK K.	23–MAY–25

DRAWING TITLE:
DELHI MRTS PROJECT PHASE IV LINE 7 EXTENSION
TRAIN CONTROL & SIGNALLING SYSTEM CONTRACT DS03-B
TRACK AND SIGNALLING PLAN LINE 7 EXTENSION
YAMUNA VIHAR TO BURARI (MAINLINE)

DRAWING No:	COST CENTRE:	SCALE	SHEET	CONT.	REV.
100650339	B PRELIMINARIES AND GENERAL REQUIREMENTS	N/S	12	13	7.0

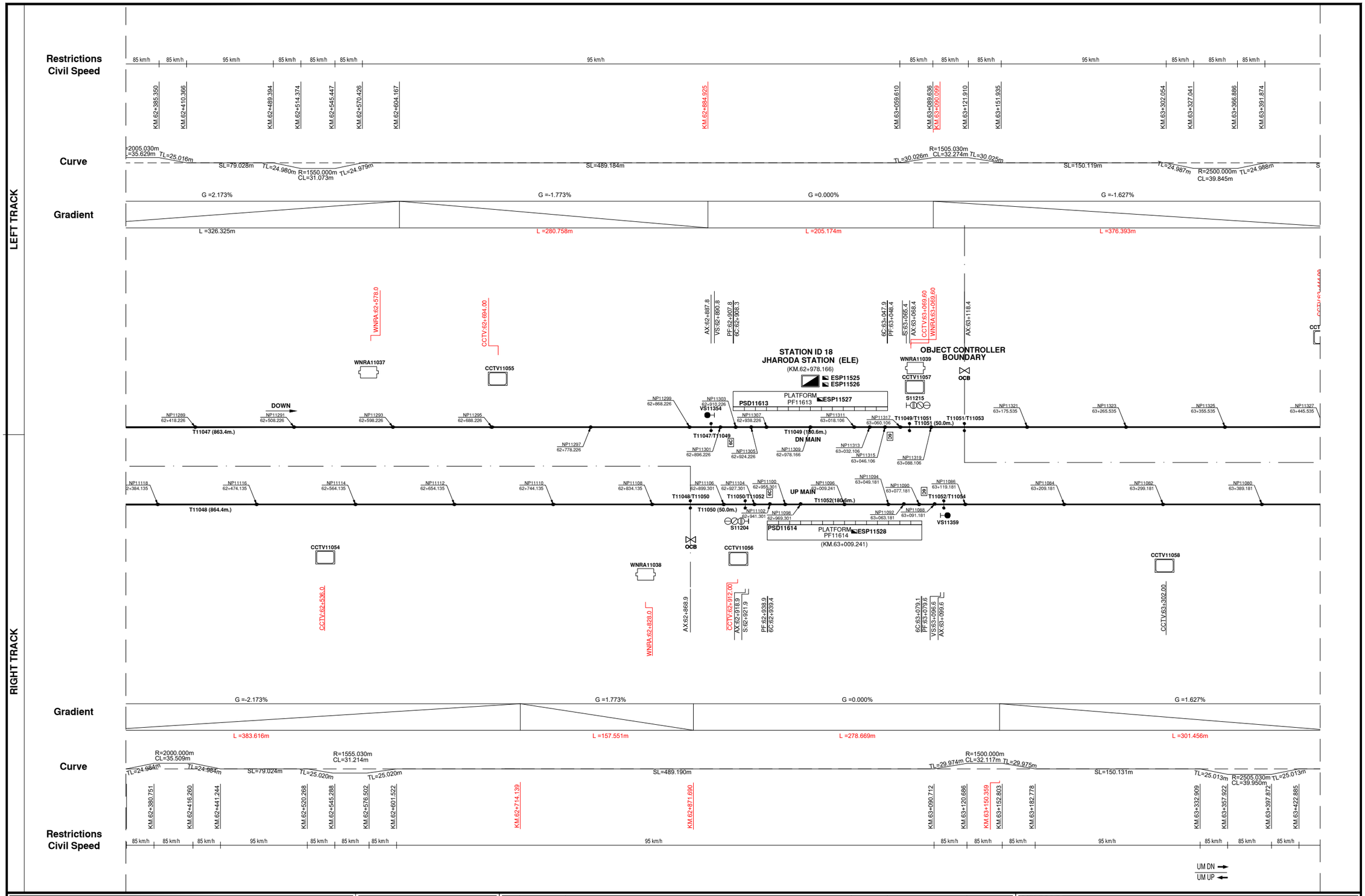

DELHI METRO RAIL CORPORATION LTD.
N.B.C.C. PLACE, BHISHMA PITAMAH MARG, PRAGATI VIHAR, NEW DELHI-110003

ORIGINATOR:
ALSTOM
•mobility by nature•

REV	DATE	DESCRIPTION
7.0	23–MAY–25	RELEASED

	NAME	DATE
DESIGNED	SUVASHREE S.	20–MAY–25
CHECKED	ALISHA S.	21–MAY–25
VALIDATED	UTSAV J.	22–MAY–25
APPROVED	ASHOK K.	23–MAY–25

DRAWING TITLE:
DELHI MRTS PROJECT PHASE IV LINE 7 EXTENSION
TRAIN CONTROL & SIGNALLING SYSTEM CONTRACT DS03-B
TRACK AND SIGNALLING PLAN LINE 7 EXTENSION
YAMUNA VIHAR TO BURARI (MAINLINE)

DRAWING No:	COST CENTRE:	SCALE	SHEET	CONT.	REV.
100650339	B PRELIMINARIES AND GENERAL REQUIREMENTS	N/S	13	14	7.0

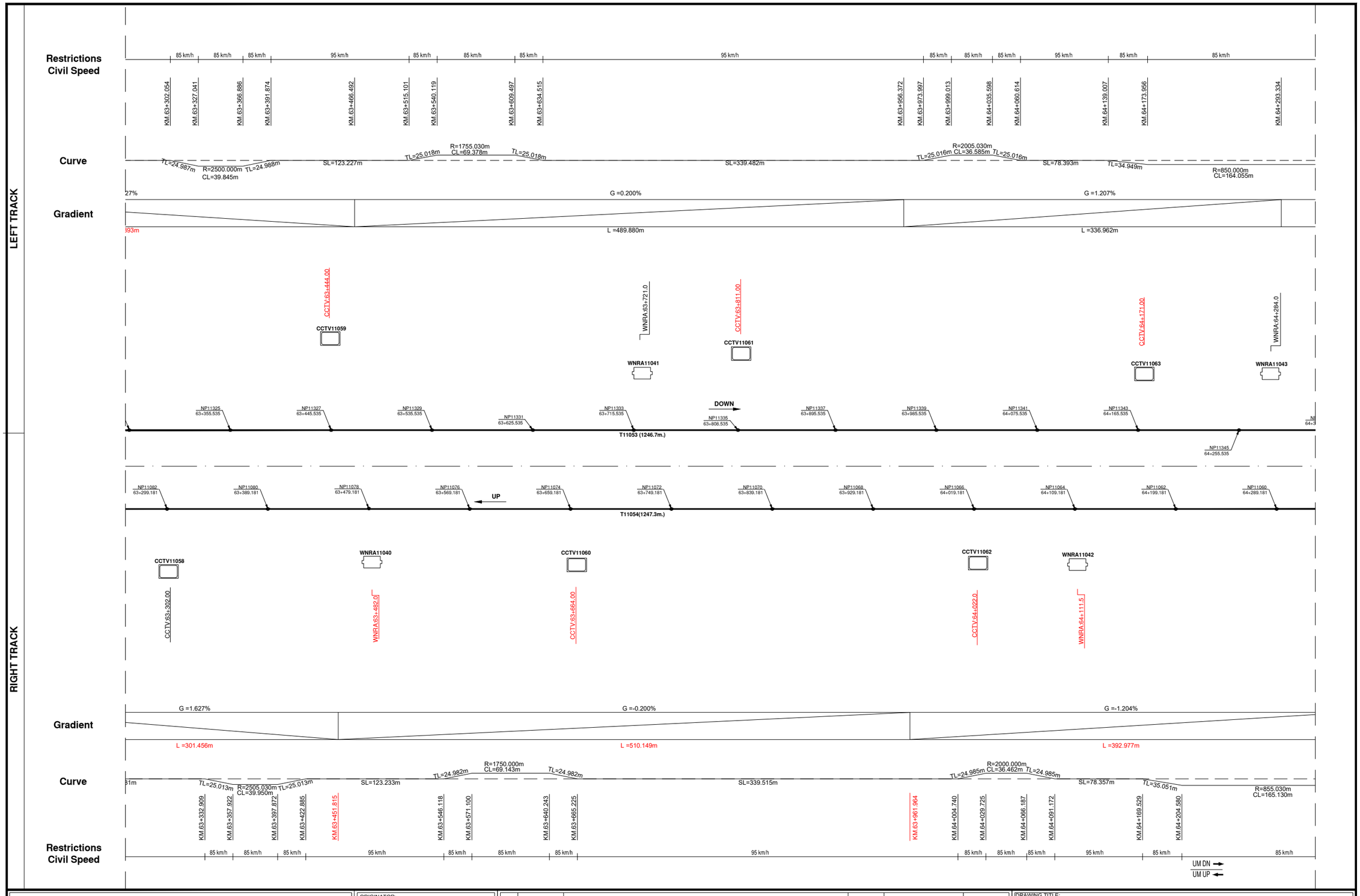

DELHI METRO RAIL CORPORATION LTD.
N.B.C.C. PLACE, BHISHMA PITAMAH MARG, PRAGATI VIHAR, NEW DELHI-110003

ORIGINATOR:
ALSTOM
•mobility by nature•

REV	DATE	DESCRIPTION
7.0	23–MAY–25	RELEASED

	NAME	DATE
DESIGNED	SUVASHREE S.	20–MAY–25
CHECKED	ALISHA S.	21–MAY–25
VALIDATED	UTSAV J.	22–MAY–25
APPROVED	ASHOK K.	23–MAY–25

DRAWING TITLE:
DELHI MRTS PROJECT PHASE IV LINE 7 EXTENSION
TRAIN CONTROL & SIGNALLING SYSTEM CONTRACT DS03-B
TRACK AND SIGNALLING PLAN LINE 7 EXTENSION
YAMUNA VIHAR TO BURARI (MAINLINE)

DRAWING No:	COST CENTRE:	SCALE	SHEET	CONT.	REV.
100650339	B PRELIMINARIES AND GENERAL REQUIREMENTS	N/S	14	15	7.0

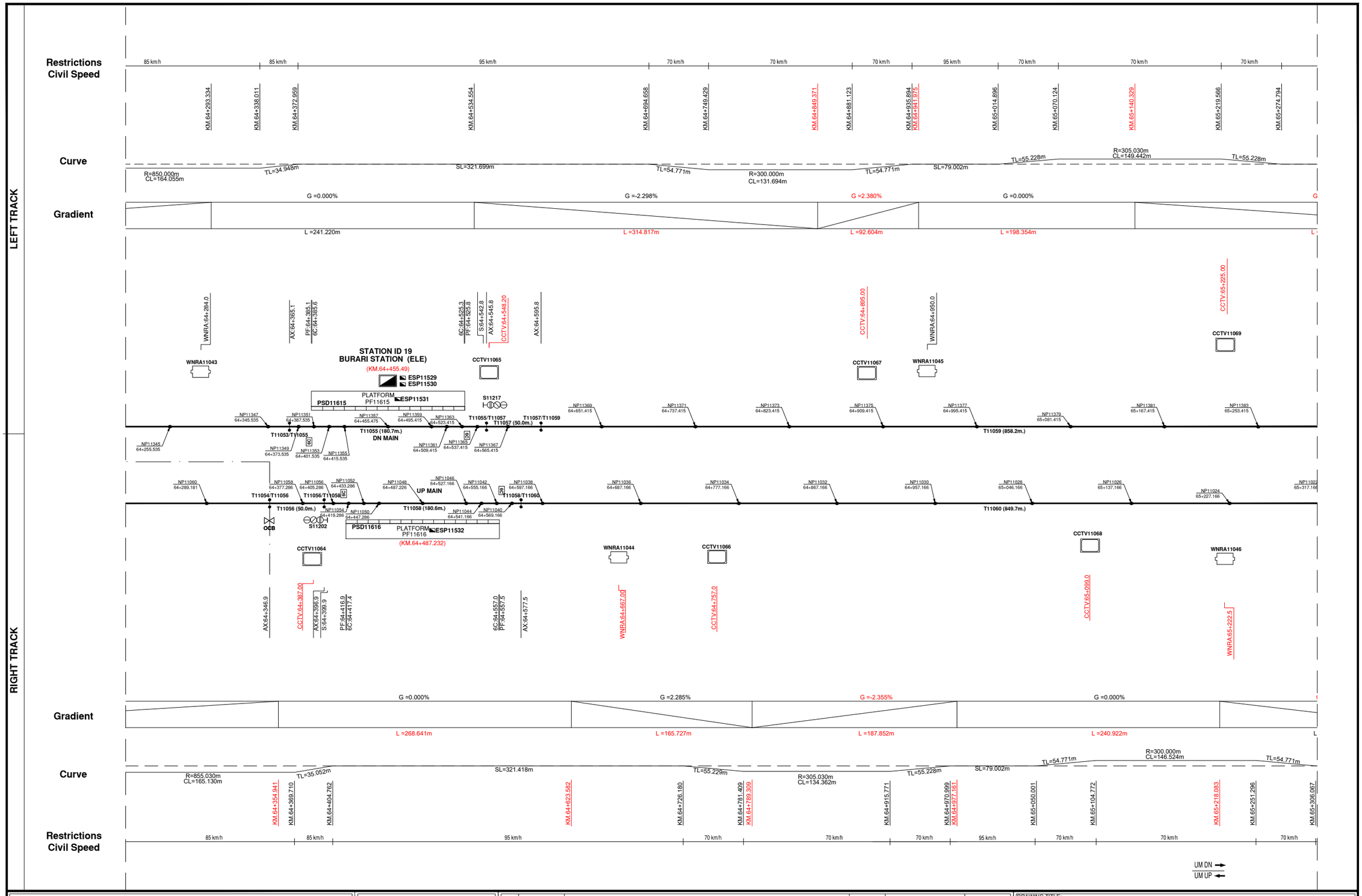

DELHI METRO RAIL CORPORATION LTD.
N.B.C.C. PLACE, BHISHMA PITAMAH MARG, PRAGATI VIHAR, NEW DELHI-110003

ORIGINATOR:
ALSTOM
•mobility by nature•

REV	DATE	DESCRIPTION
7.0	23-MAY-25	RELEASED

	NAME	DATE
DESIGNED	SUVASHREE S.	20-MAY-25
CHECKED	ALISHA S.	21-MAY-25
VALIDATED	UTSAV J.	22-MAY-25
APPROVED	ASHOK K.	23-MAY-25

DRAWING TITLE:
DELHI MRTS PROJECT PHASE IV LINE 7 EXTENSION
TRAIN CONTROL & SIGNALLING SYSTEM CONTRACT DS03-B
TRACK AND SIGNALLING PLAN LINE 7 EXTENSION
YAMUNA VIHAR TO BURARI (MAINLINE)

DRAWING No:	COST CENTRE:	SCALE	SHEET	CONT.	REV.
100650339	B PRELIMINARIES AND GENERAL REQUIREMENTS	N/S	15	16	7.0

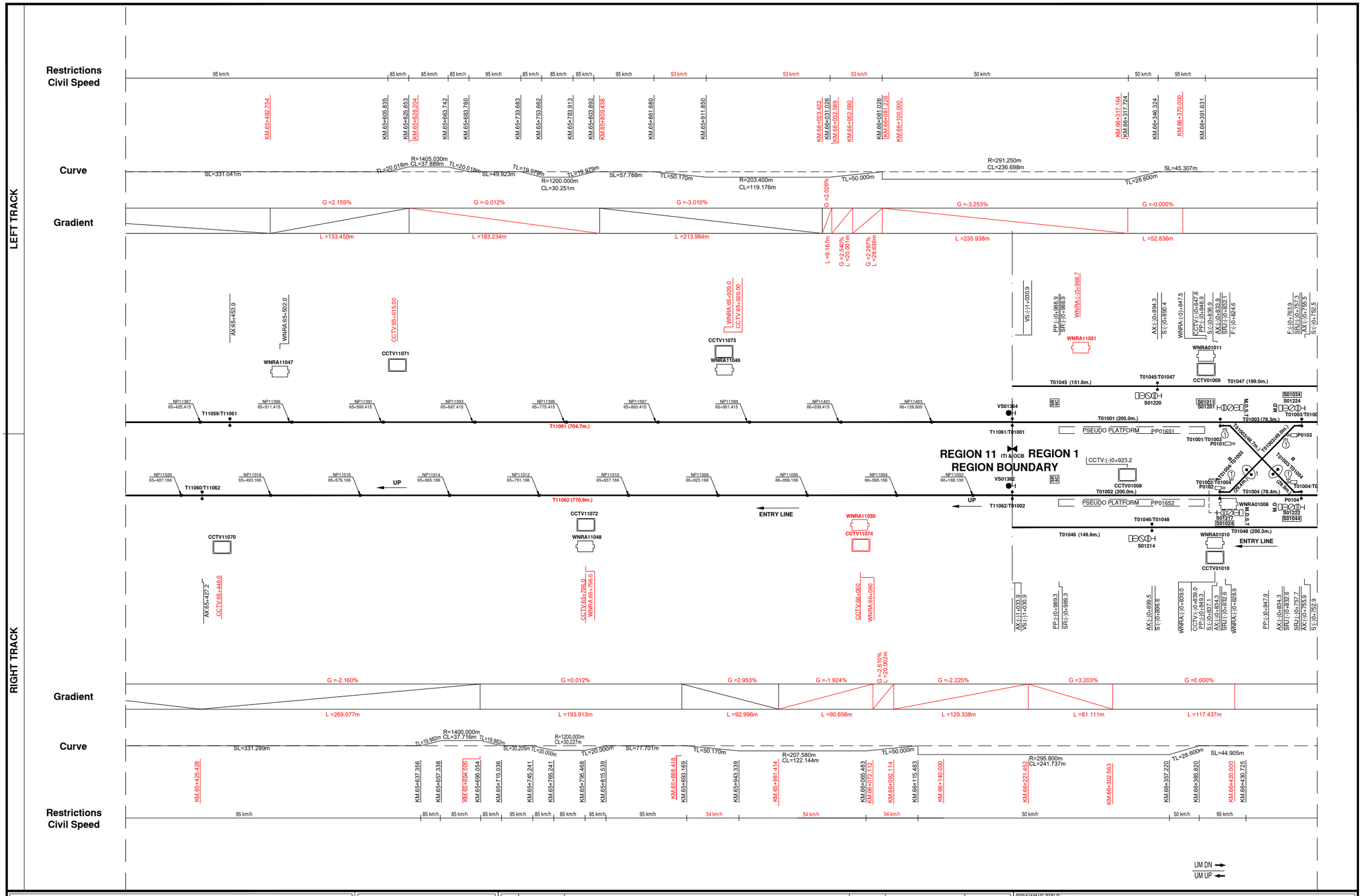

DELHI METRO RAIL CORPORATION LTD.
N.B.C.C. PLACE, BHISHMA PITAMAH MARG, PRAGATI VIHAR, NEW DELHI-110003

ORIGINATOR: ALSTOM ·mobility by nature·

REV	DATE	DESCRIPTION
7.0	23–MAY–25	RELEASED

	NAME	DATE
DESIGNED	SUVASHREE S.	20–MAY–25
CHECKED	ALISHA S.	21–MAY–25
VALIDATED	UTSAV J.	22–MAY–25
APPROVED	ASHOK K.	23–MAY–25

DRAWING TITLE:
DELHI MRTS PROJECT PHASE IV LINE 7 EXTENSION
TRAIN CONTROL & SIGNALLING SYSTEM CONTRACT DS03-B
TRACK AND SIGNALLING PLAN LINE 7 EXTENSION
YAMUNA VIHAR TO BURARI (MAINLINE)

DRAWING No:	COST CENTRE:	SCALE	SHEET	CONT.	REV.
100650339	B PRELIMINARIES AND GENERAL REQUIREMENTS	N/S	16	17	7.0

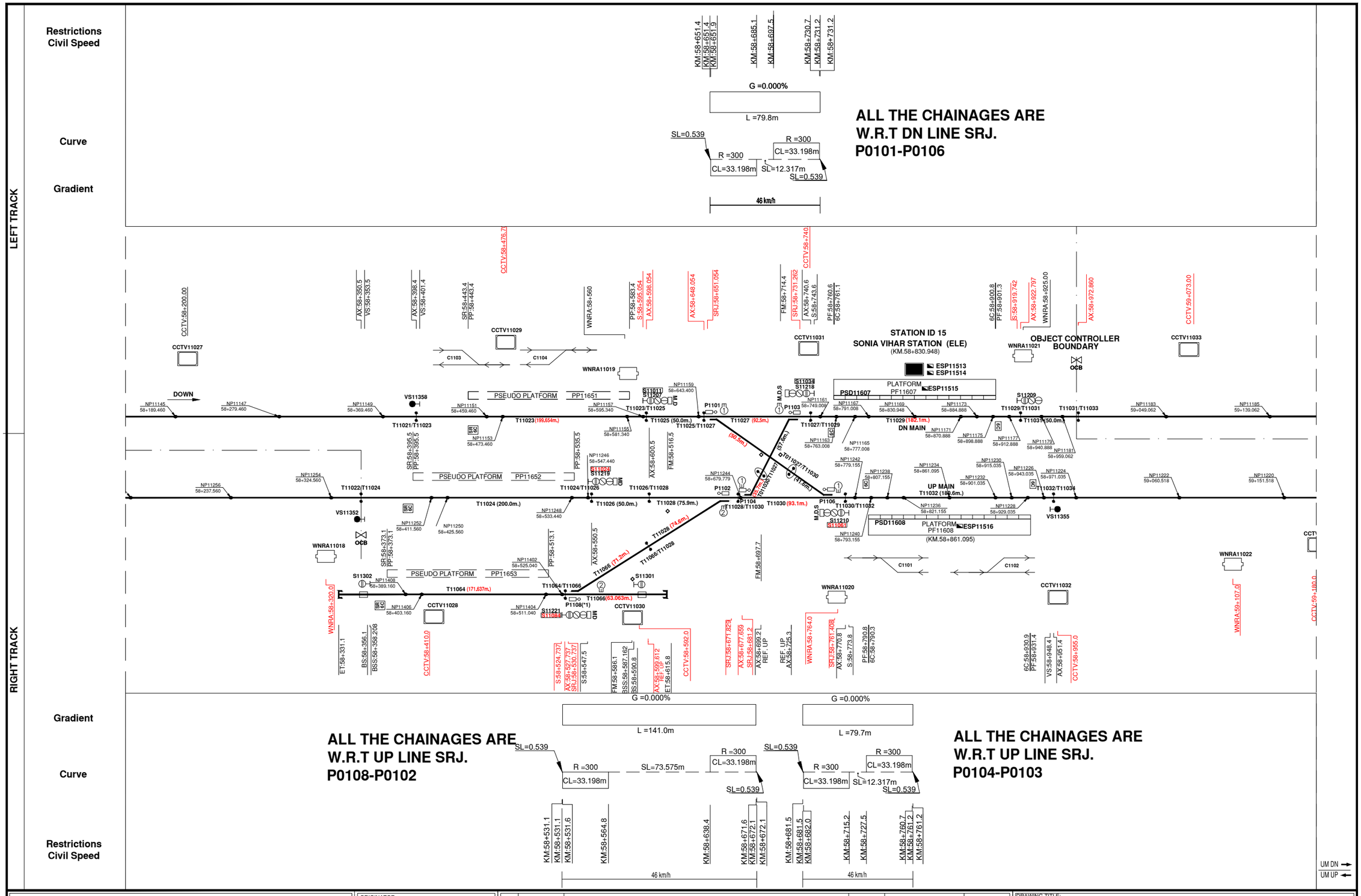

DELHI METRO RAIL CORPORATION LTD.
N.B.C.C. PLACE, BHISHMA PITAMAH MARG, PRAGATI VIHAR, NEW DELHI-110003

ORIGINATOR: ALSTOM ·mobility by nature·

REV	DATE	DESCRIPTION
7.0	23-MAY-25	RELEASED

	NAME	DATE
DESIGNED	SUVASHREE S.	20-MAY-25
CHECKED	ALISHA S.	21-MAY-25
VALIDATED	UTSAV J.	22-MAY-25
APPROVED	ASHOK K.	23-MAY-25

DRAWING TITLE:
DELHI MRTS PROJECT PHASE IV LINE 7 EXTENSION
TRAIN CONTROL & SIGNALLING SYSTEM CONTRACT DS03-B
TRACK AND SIGNALLING PLAN LINE 7 EXTENSION
YAMUNA VIHAR TO BURARI (MAINLINE)

DRAWING No:	COST CENTRE:	SCALE	SHEET	CONT.	REV.
100650339	B PRELIMINARIES AND GENERAL REQUIREMENTS	N/S	17	18	7.0


Sheet 1 of 2
Sheet 2 of 2
Sheet 1 of 2
Sheet 2 of 2
Sheet 1 of 2
Sheet 2 of 2